Scanned by CamScanner

Scanned by CamScanner

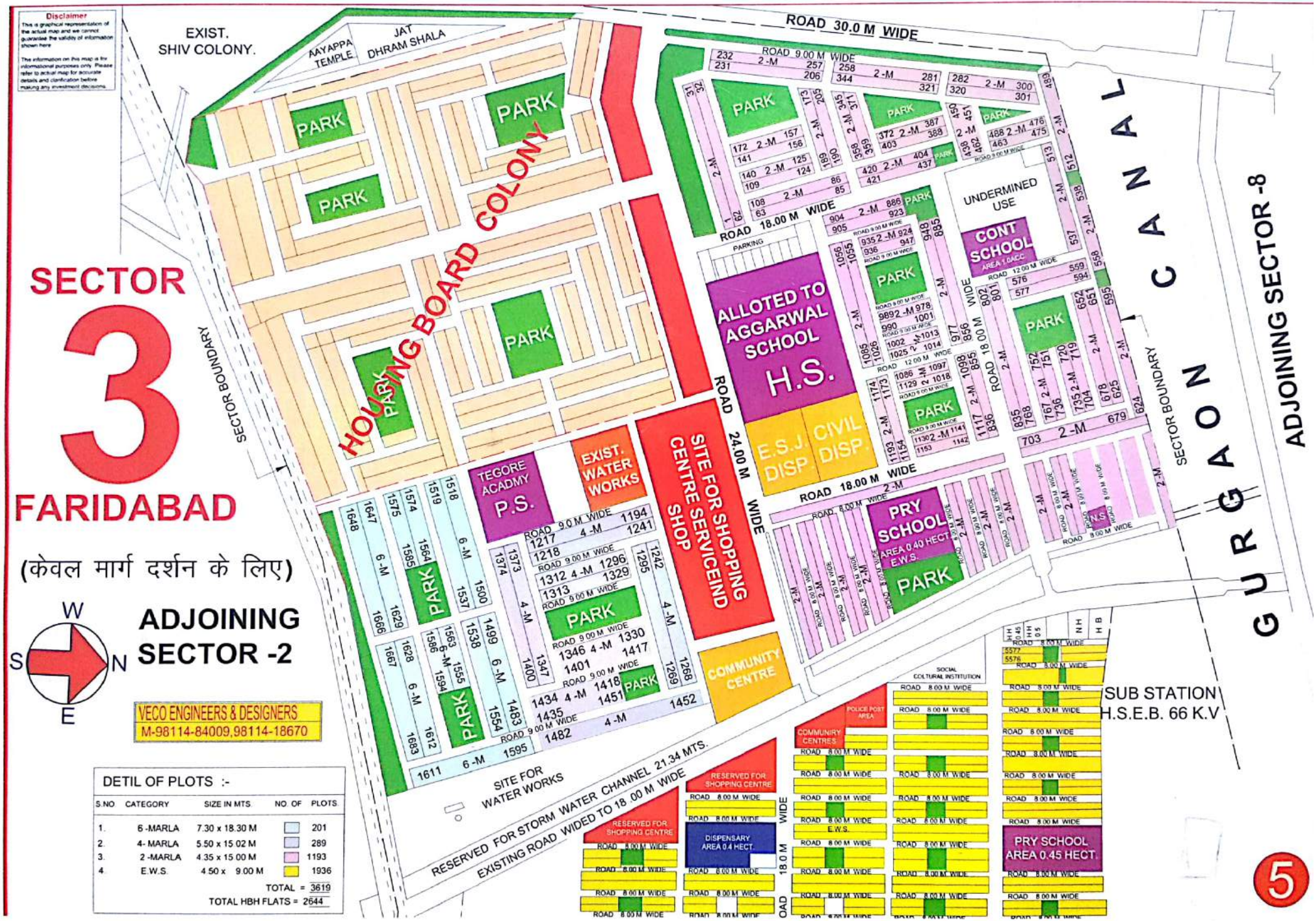

Scanned by CamScanner

6 FARIDABAD SECTOR- 4 (RES.)

केवल मार्ग दर्शन के लिए

DETAIL OF PLOTS

S.NO.	CATEGORY	SIZE	NO OF PLOTS
1.	10-MARLA	30' x 75'	156
2.	5-MARLA	20' x 60	68
		TOTAL	224

VECO ENGINEERS & DESIGNERS
M-98114-84009,98114-18670

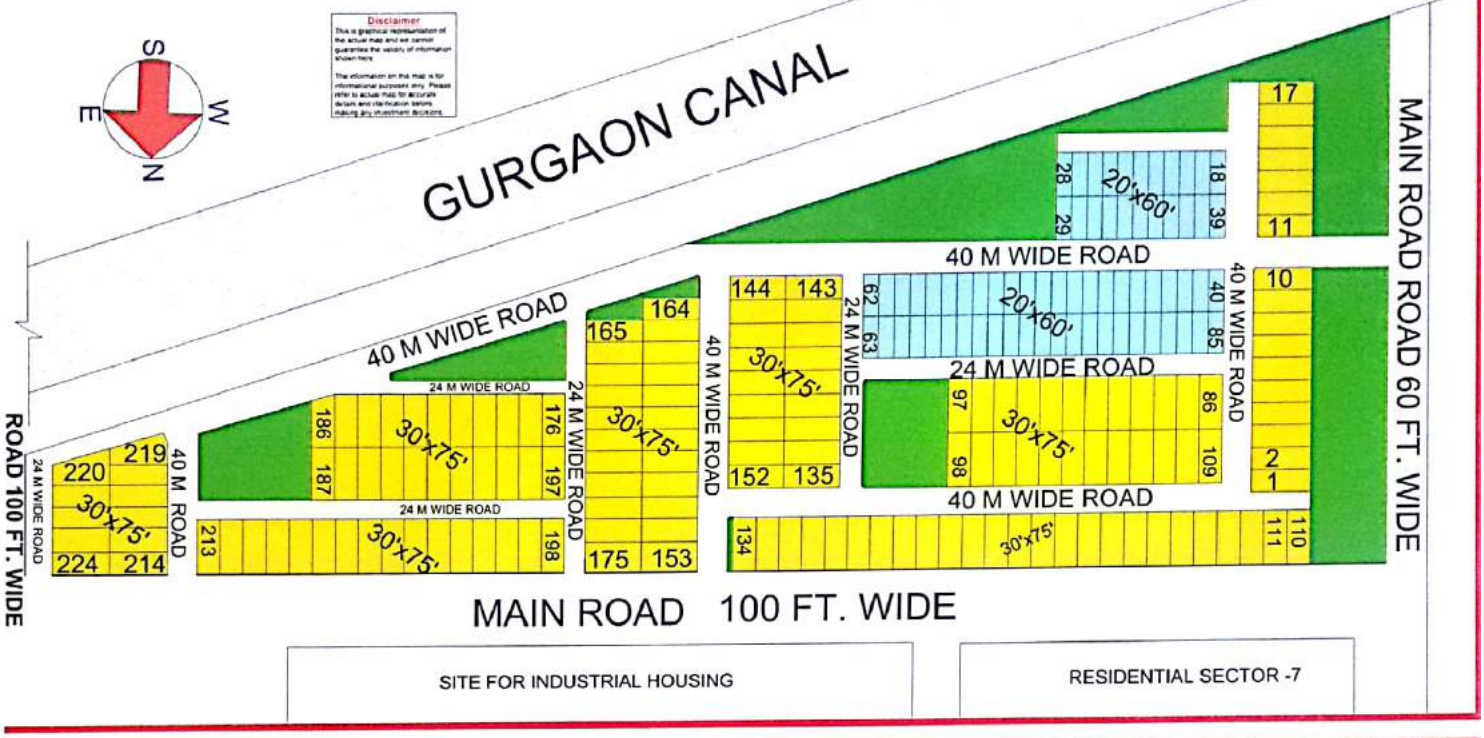

LAY OUT PLAN OF SECTOR- 4 (IND) FARIDABAD

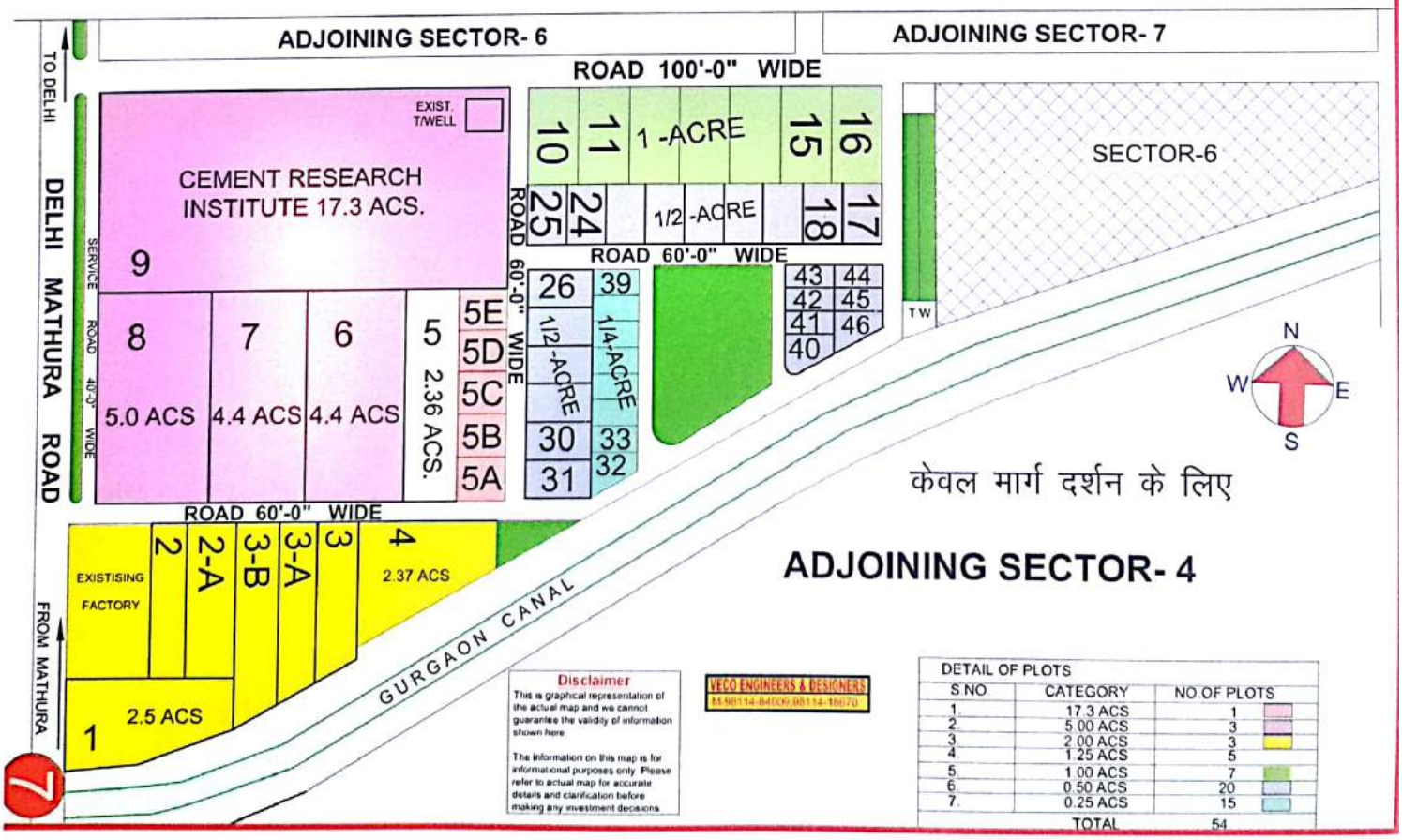

Disclaimer
This is graphical representation of the actual map and we cannot guarantee the validity of information shown here
The information on this map is for informational purposes only. Please refer to actual map for accurate details and clarification before making any investment decisions.

VECO ENGINEERS & DESIGNERS
M-98114-84009,98114-18670

DETAIL OF PLOTS

S.NO	CATEGORY	NO OF PLOTS
1.	17.3 ACS	1
2.	5.00 ACS	3
3.	2.00 ACS	3
4.	1.25 ACS	5
5.	1.00 ACS	7
6.	0.50 ACS	20
7.	0.25 ACS	15
	TOTAL	54

Scanned by CamScanner

SECTOR-6 FARIDABAD

केवल मार्ग दर्शन के लिए

S.NO.	CATEGORY	NO. OF PLOTS.
1.	5.00 ACS	11
2.	2.50 "	8
3.	2.00 "	22
4.	1.50 "	8
5.	1.00 "	40
6.	0.50 "	31
7.	0.25 "	40
		TOTAL =160

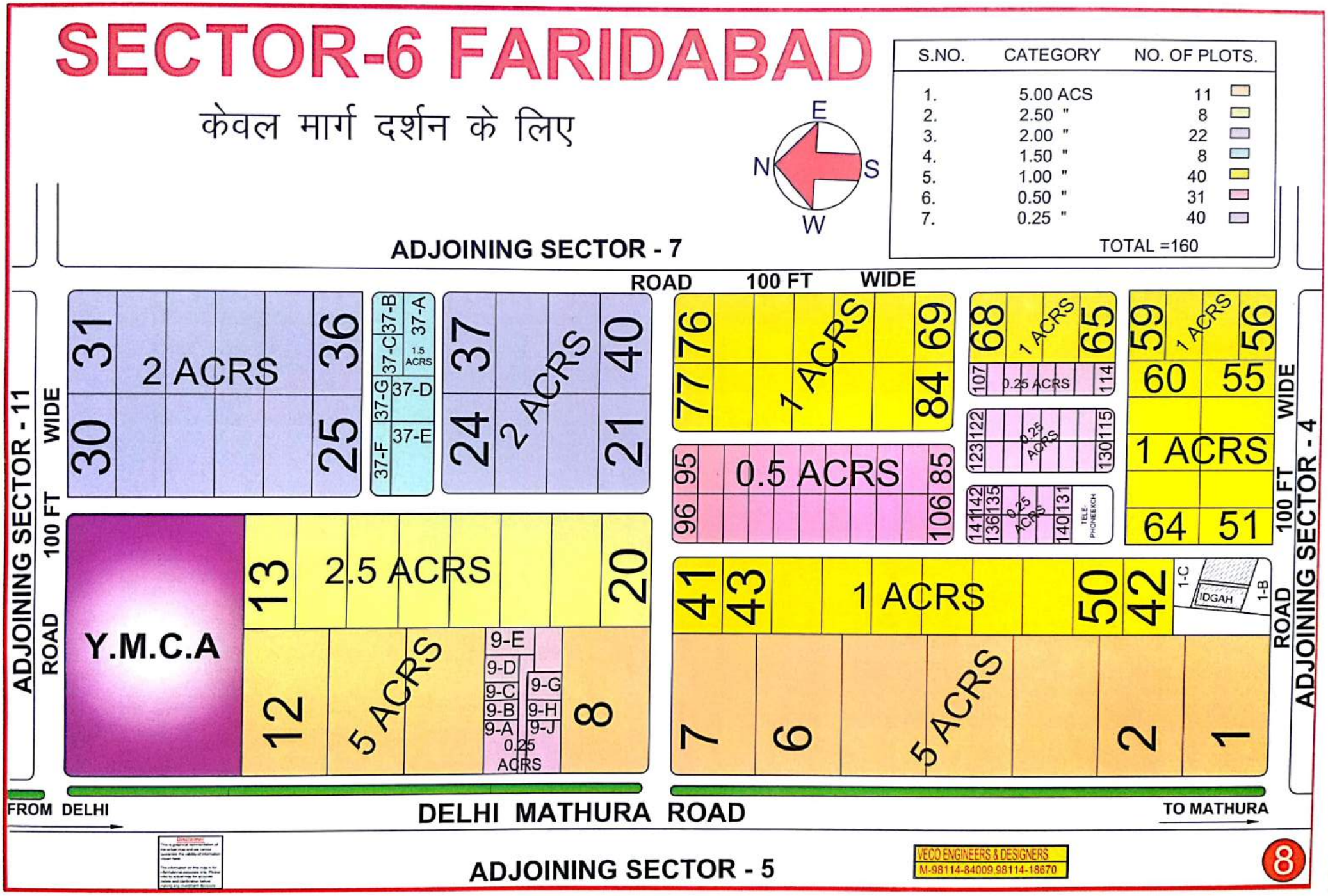

Scanned by CamScanner

LAY OUT PLAN OF SECTOR- 7 FARIDABAD

(केवल मार्ग दर्शन के लिए)

S.NO.	CATEGORY	SIZE IN FT.	NO. OF PLOTS.
1.	1 -KANAL	50' x 90'	350
2.	10 -MARLA	30' x 75'	758
3.	6 -MARLA	24' x 60'	138
4.	5 -MARLA	20' x 60'	1224
		TOTAL =	2370
		H.B.H. FLATS	= 517 NOS.

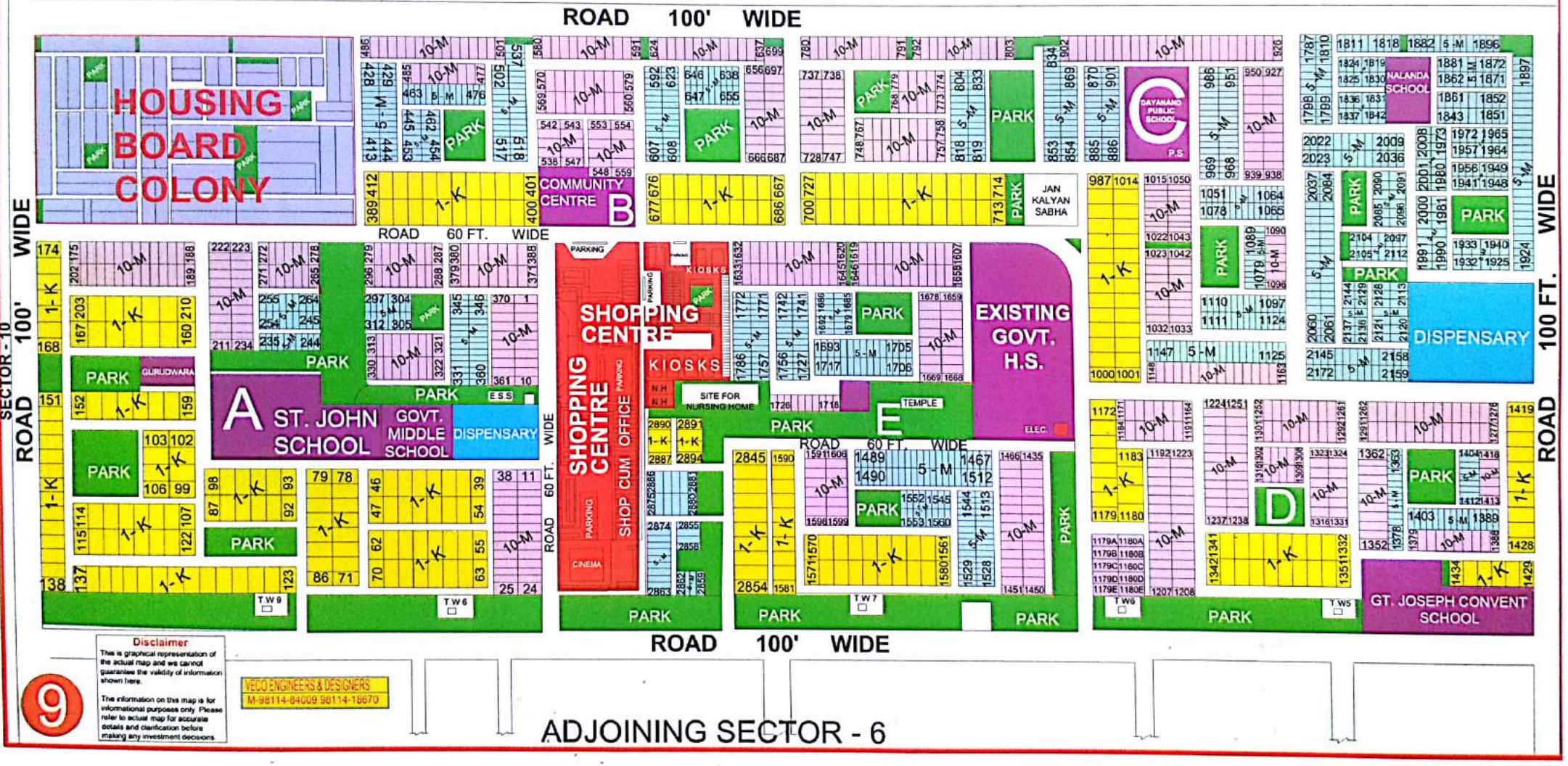

Scanned by CamScanner

LAY OUT PLAN OF SECTOR- 8 FARIDABAD

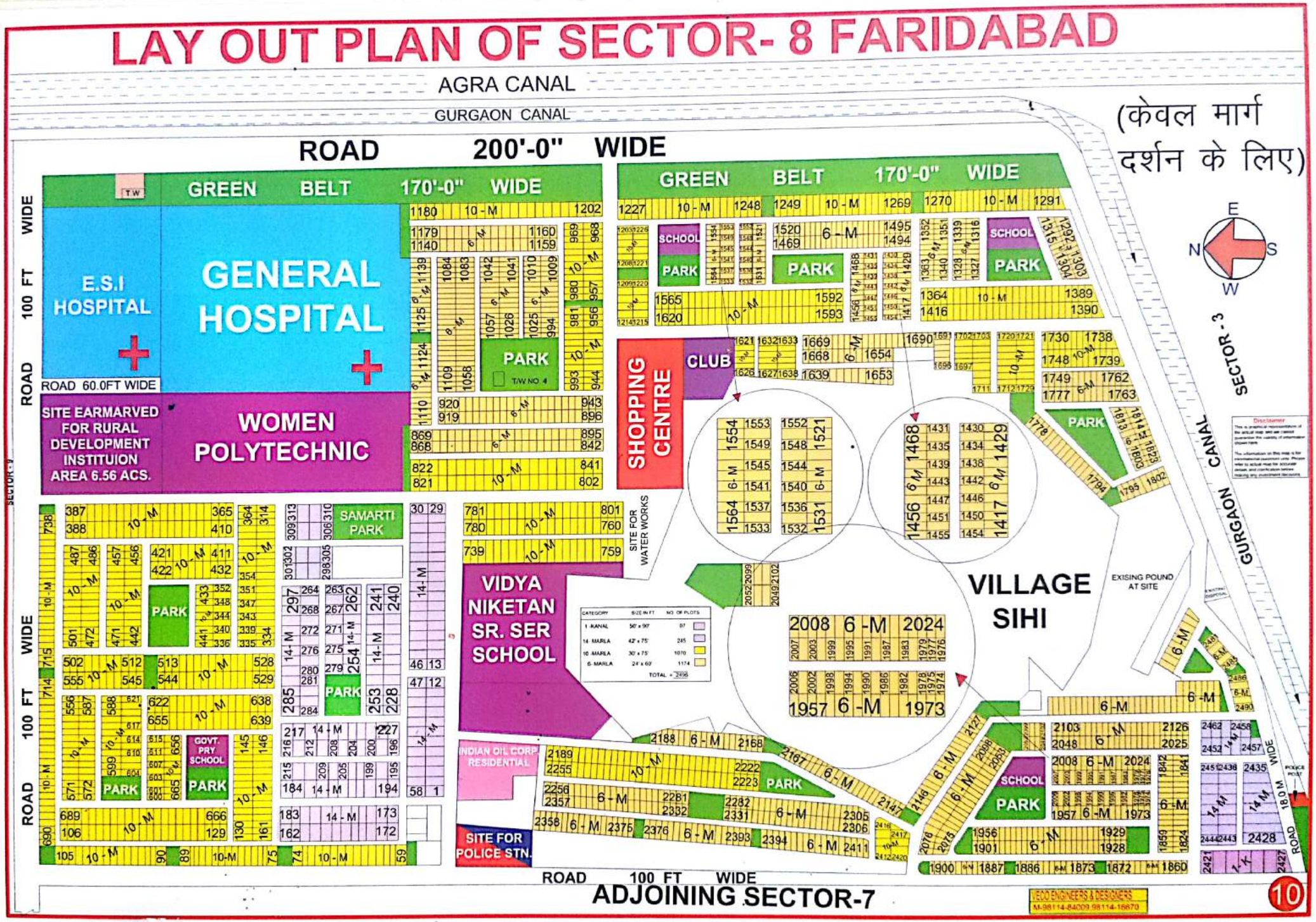

Scanned by CamScanner

(केवल मार्ग दर्शन के लिए)

LAY OUT PLAN OF SECTOR- 9 FARIDABAD

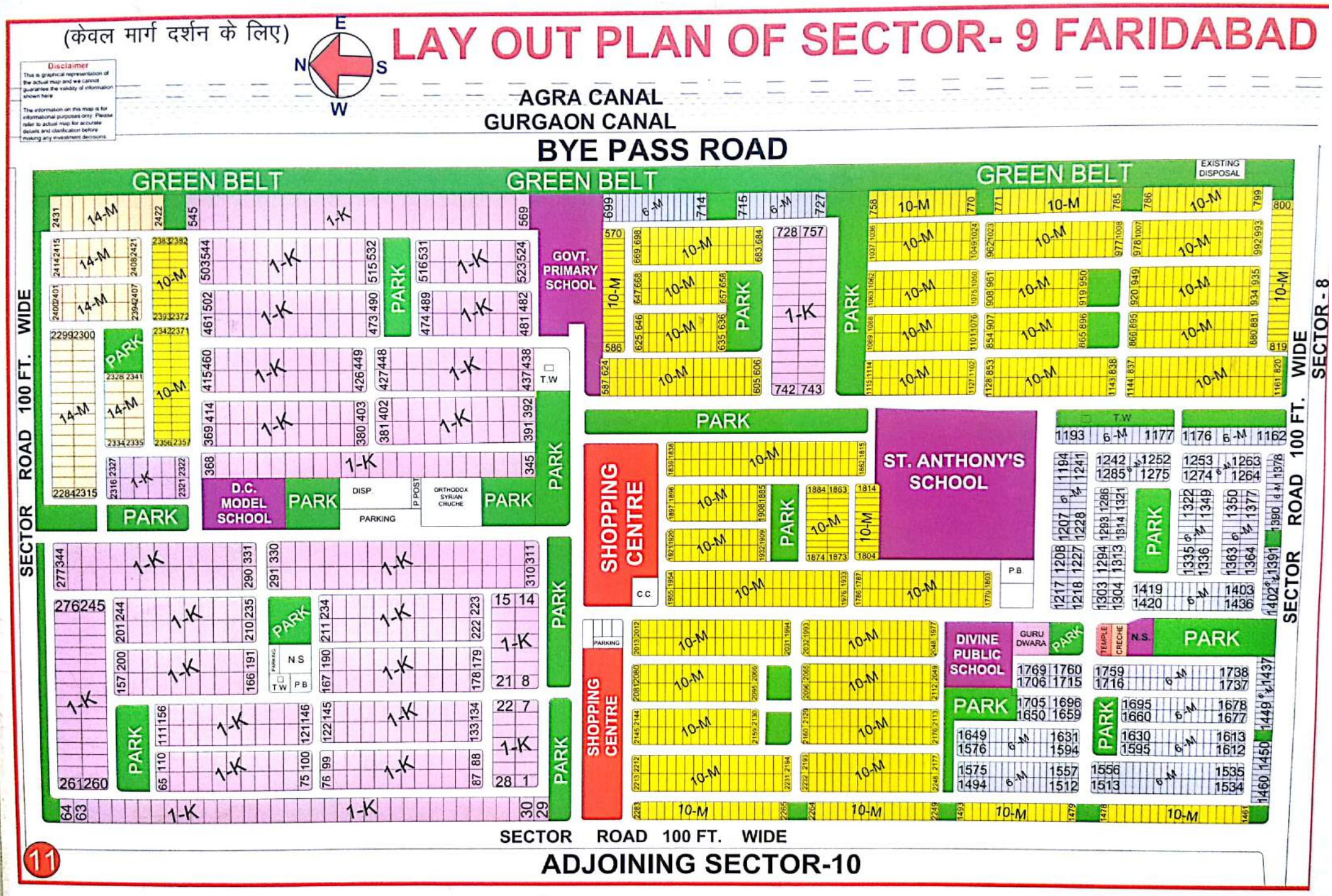

Scanned by CamScanner

LAY OUT PLAN OF SECTOR-10 FARIDABAD

(केवल मार्ग दर्शन के लिए)

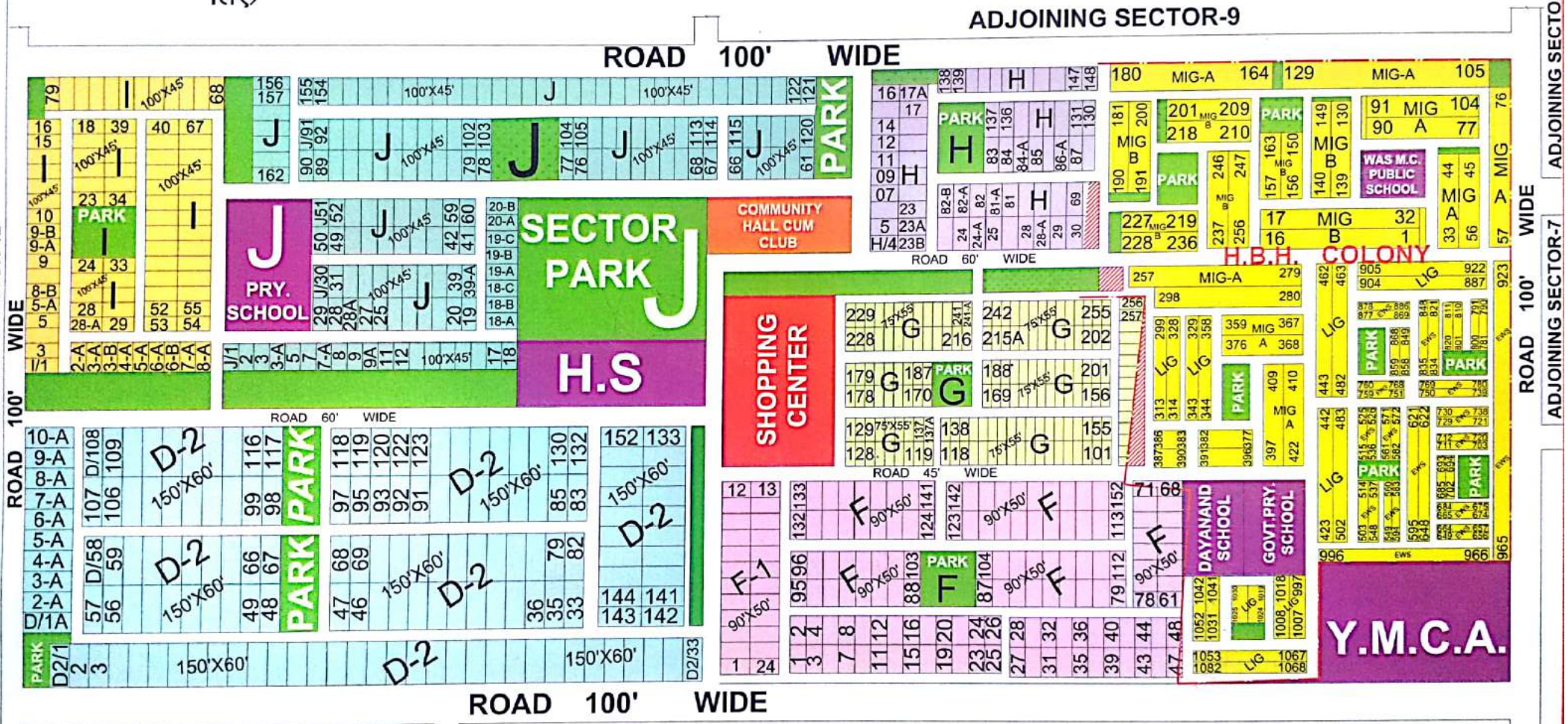

Disclaimer

This is graphical representation of the actual map and we cannot guarantee the validity of information shown here

The information on this map is for informational purposes only. Please refer to actual map for accurate details and clarification before making any investment decisions

VECO ENGINEERS & DESIGNERS
M-98114-84009,98114-18670

Scanned by CamScanner

LAY OUT PLAN OF SECTOR-11 FARIDABAD

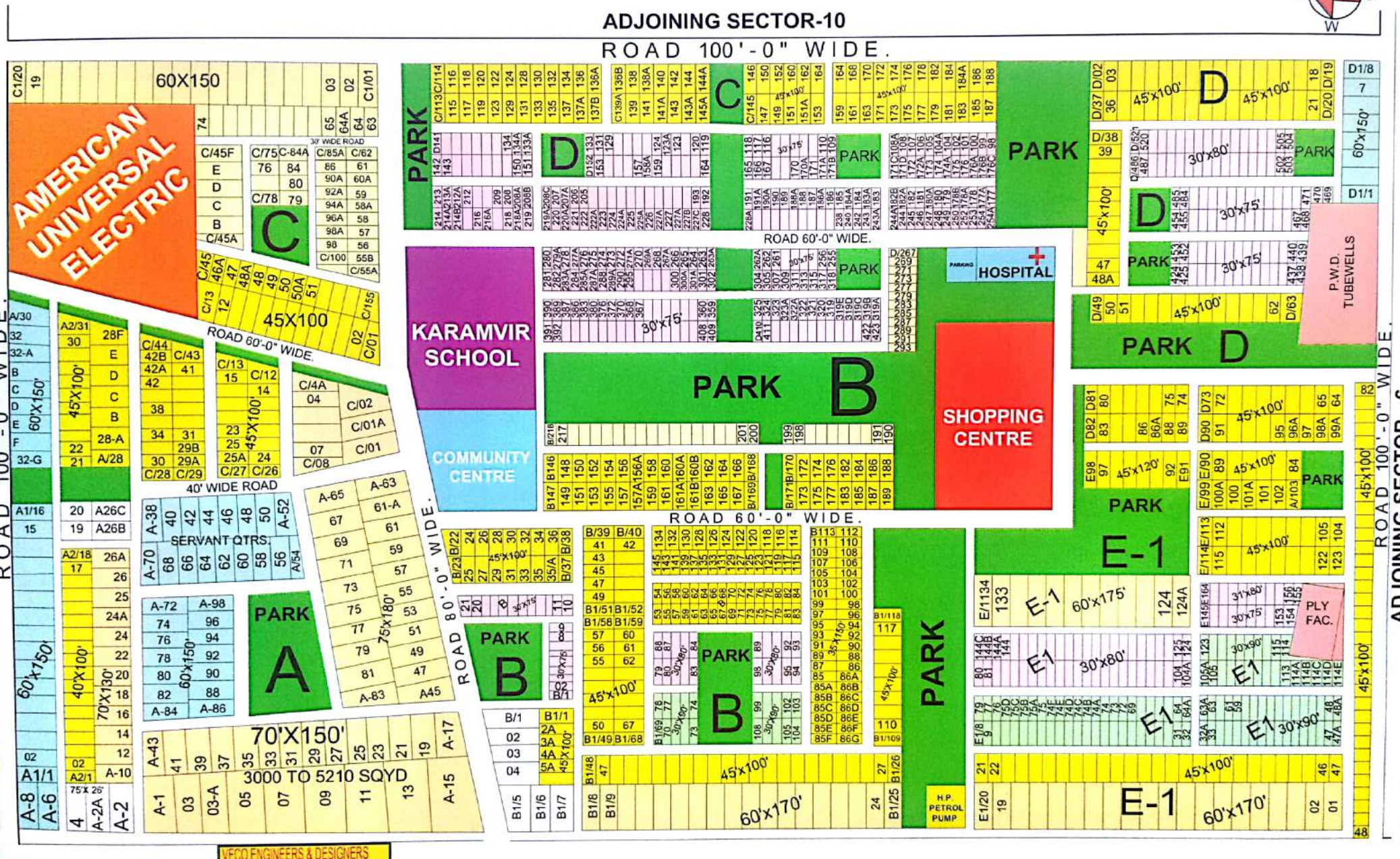

VECO ENGINEERS & DESIGNERS
M-98114-84009,98114-18670

Scanned by CamScanner

SECTOR-11 SHOPPING CENTRE



VECO ENGINEERS & DESIGNERS
M-98114-84009,98114-18670

SECTOR-11 SHOPPING CENTRE

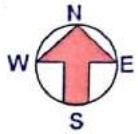

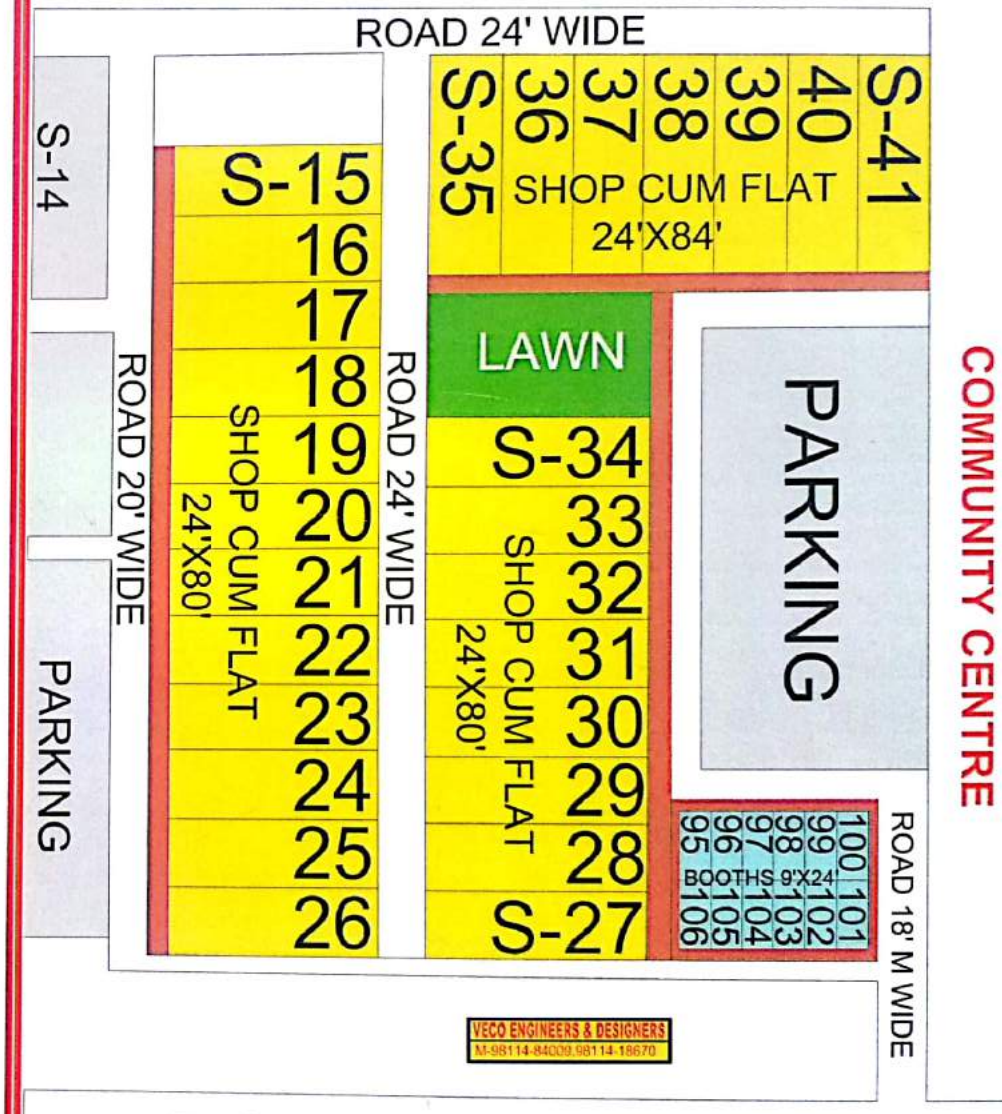

VECO ENGINEERS & DESIGNERS
M-98114-84009,98114-18670

Scanned by CamScanner

LAY OUT PLAN OF SECTOR-14 FARIDABAD

VECO ENGINEERS & DESIGNERS
M-98114-84009,98114-18670

(केवल मार्ग दर्शन के लिए)

S.NO.	CATEGORY	SIZE IN FT.	NO. OF PLOTS
1.	2 -KANAL	70' x 130'	86
2.	1 -KANAL	50' x 90'	752
3.	14 -MARLA	42' x 75'	670
		TOTAL =	1508

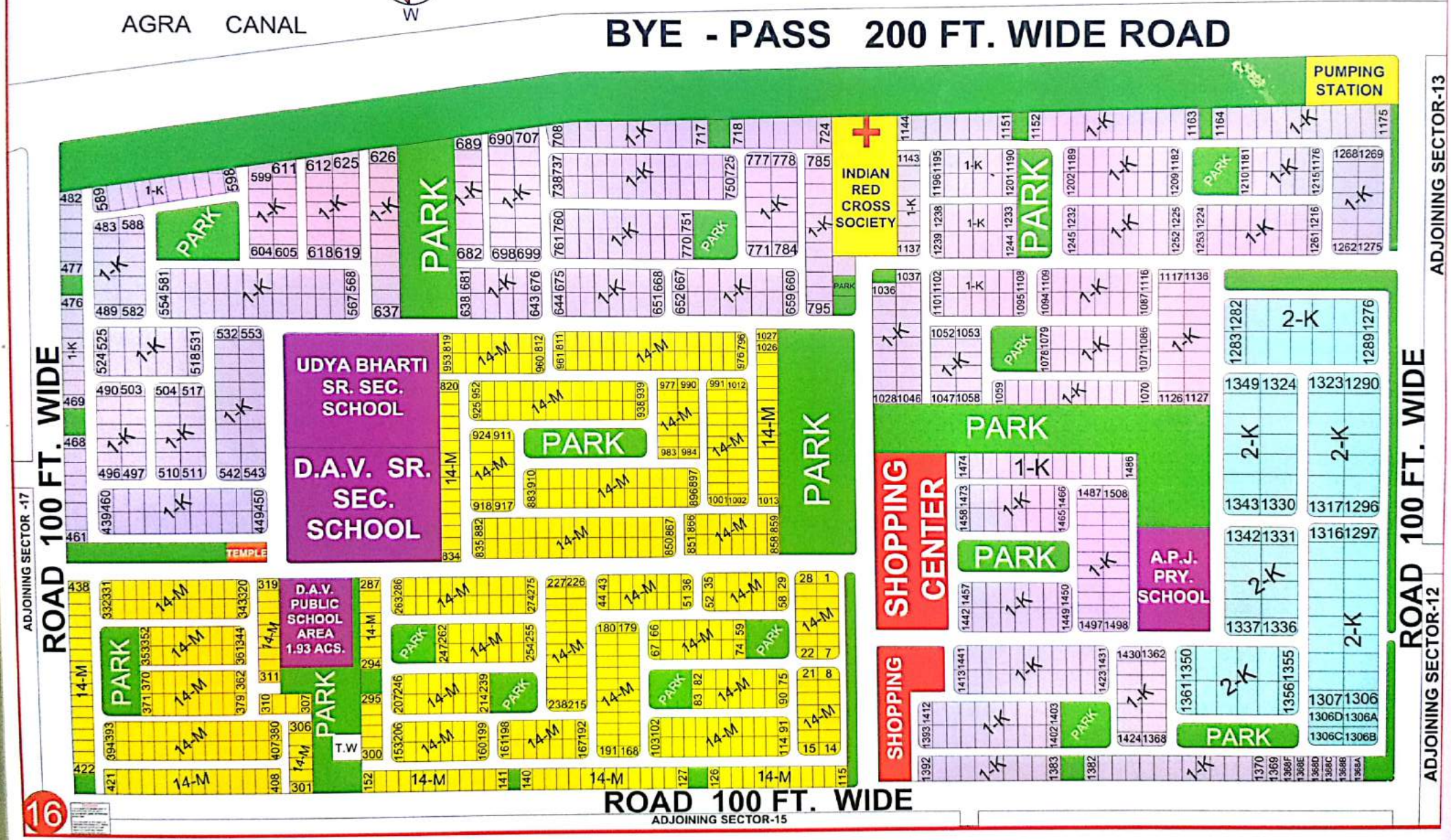

Scanned by CamScanner

(केवल मार्ग दर्शन के लिए) **SECTOR-14 (SHOPPING CENTRE)**

VECO ENGINEERS & DESIGNERS
M-98114-84009,98114-18670

SECTOR-15 (SHOPPING CENTRE)

(केवल मार्ग दर्शन के लिए)

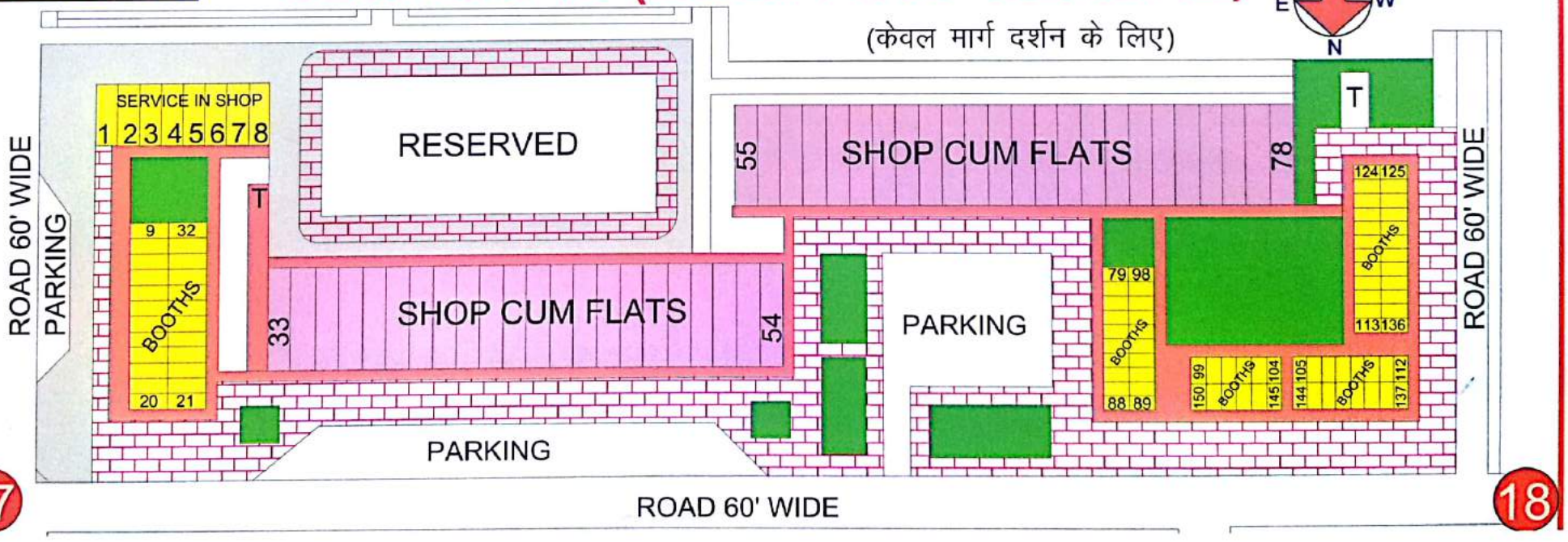

Scanned by CamScanner

LAY OUT PLAN OF SECTOR-15 FARIDABAD

(केवल मार्ग दर्शन के लिए)

S.NO.	CATEGORY	SIZE IN FT.	NO. OF PLOTS
1.	2 -KANAL	70' x 130'	70
2.	1 -KANAL	50' x 90'	818
3.	14- MARLA	42' x 75'	730
		TOTAL =	1618

VECO ENGINEERS & DESIGNERS
M-98114-84009,98114-18670

Scanned by CamScanner

LAY OUT PLAN OF SECTOR- 15A FARIDABAD

(केवल मार्ग दर्शन के लिए)

Disclaimer

This is graphical representation of the actual map and we cannot guarantee the validity of information shown here.

The information on this map is for informational purposes only. Please refer to actual map for accurate details and clarification before making any investment decisions.

DETILA OF PLOTS :-

S.NO.	CATEGORY	SIZE IN FT.	NO. OF
1.	1 -KANAL	50' x 90'	184
1.	10-MARLA	30' x 75'	369
3.	6 -MARLA	24' x 60'	367
		TOTAL =	920

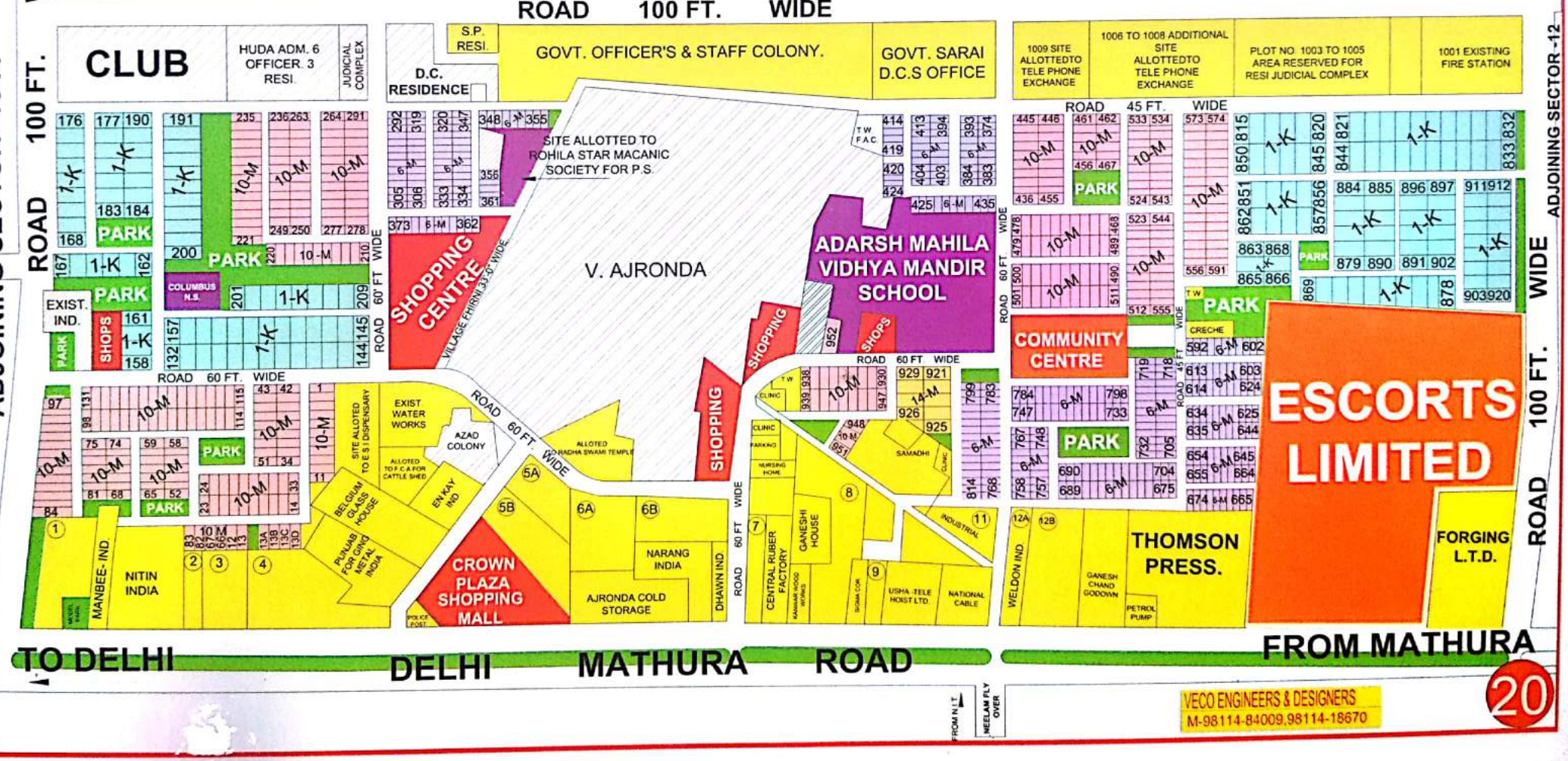

Scanned by CamScanner

LAY OUT PLAN OF SECTOR-16 FARIDABAD

(केवल मार्ग दर्शन के लिए)

S.NO.	CATEGORY	SIZE IN FT.	NO. OF PLOTS
1.	14- MARLA	42' x 75'	519
2.	10- MARLA	30' x 75'	856
3.	8- MARLA	24' x 75'	09
4.	6- MARLA	24' x 60'	1344
		TOTAL =	2728

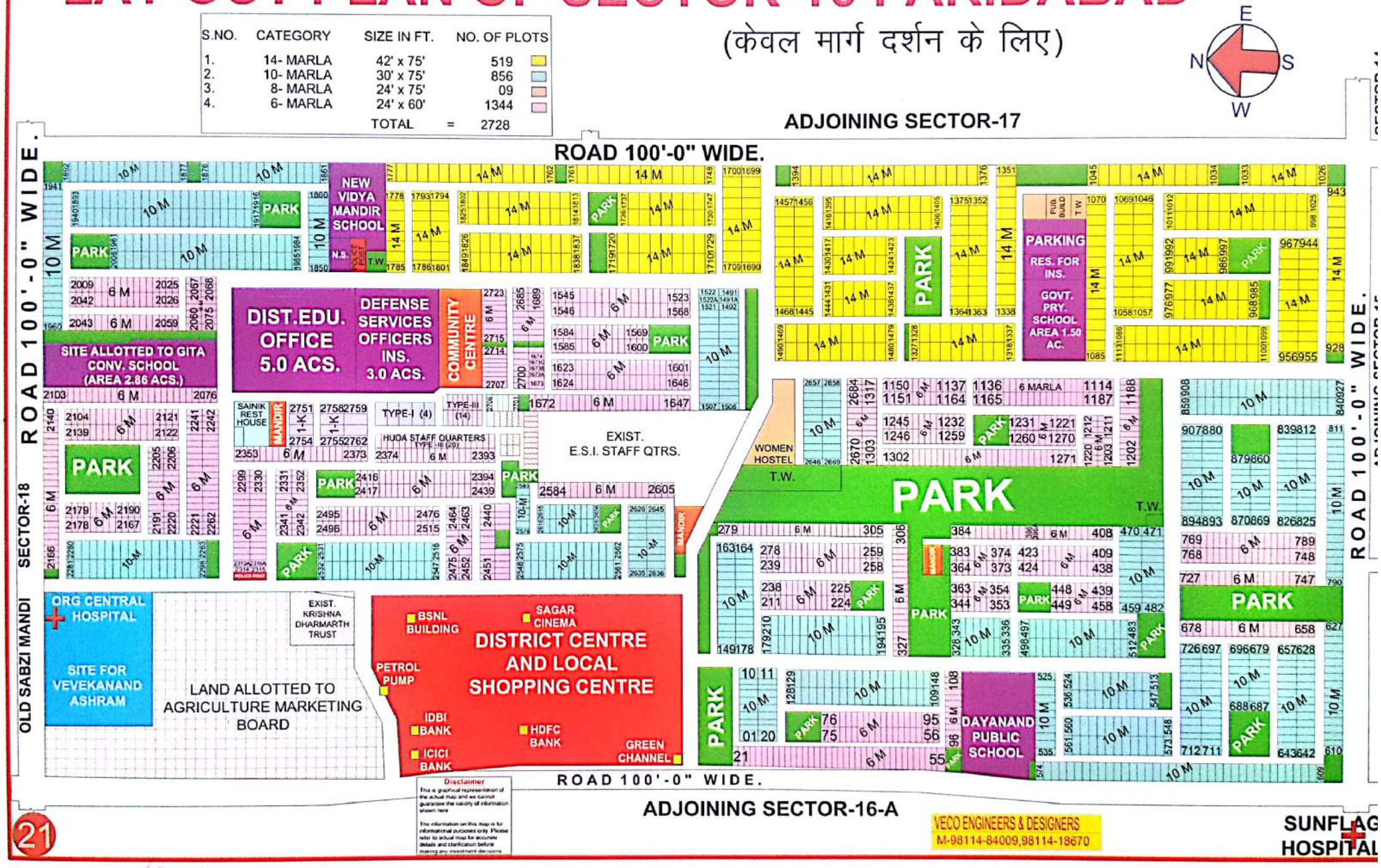

Disclaimer
This is graphical representation of the actual map and we cannot guarantee the validity of information shown here
The information on this map is for informational purposes only. Please refer to actual map for accurate details and clarification before making any investment decisions

VECO ENGINEERS & DESIGNERS
M-98114-84009,98114-18670

Scanned by CamScanner

LAY OUT PLAN OF SECTOR-16A FARIDABAD

(केवल मार्ग दर्शन के लिए)

DETAIL OF PLOTS :-

S.NO.	CATEGORY	SIZE IN FT.	NO. OF PLOTS.
1.	2 -KANAL	70' x 130'	66
2.	1 -KANAL	50' x 90'	496
3.	10 -MARLA	30' x 75'	162
		TOTAL =	724

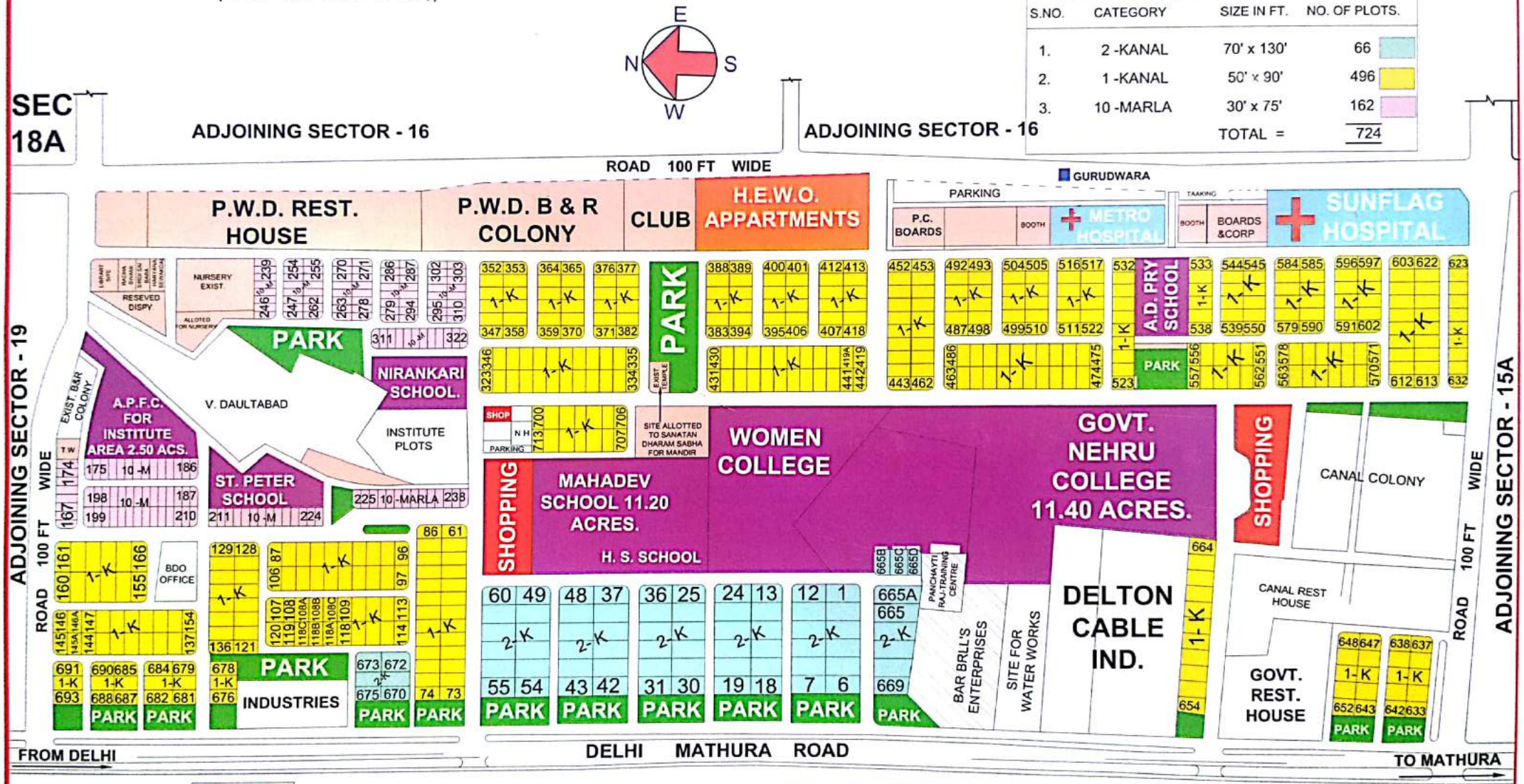

Disclaimer

This is graphical representation of the actual map and we cannot guarantee the validity of information shown here

The information on this map is for informational purposes only. Please refer to actual map for accurate details and clarification before making any investment decisions.

VECO ENGINEERS & DESIGNERS
M-98114-84009,98114-18670

Scanned by CamScanner

LayOut Plan of SECTOR-17 at FARIDABAD

(केवल मार्ग दर्शन के लिए)

S.NO.	CATEGORY	SIZE IN FT.	COL.
1.	1 -KANAL	50' x 90'	
2.	14 -MARLA	42' x 75'	
3.	10 -MARLA	30' x 75'	

E N S W

Disclaimer

This is graphical representation of the actual map and we cannot guarantee the validity of information shown here

The information on this map is for informational purposes only. Please refer to actual map for accurate details and clarification before making any investment decisions

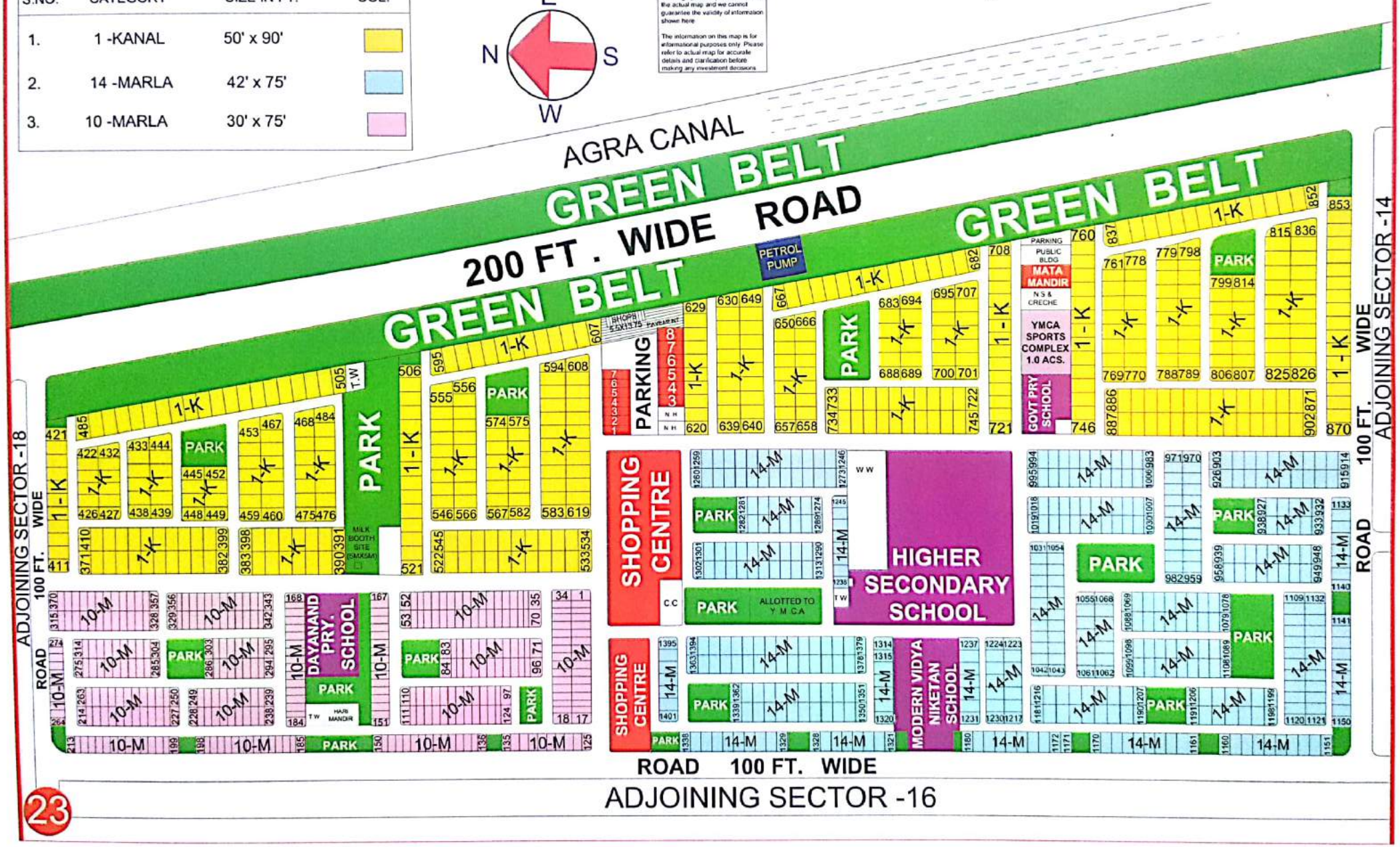

Scanned by CamScanner

Scanned by CamScanner

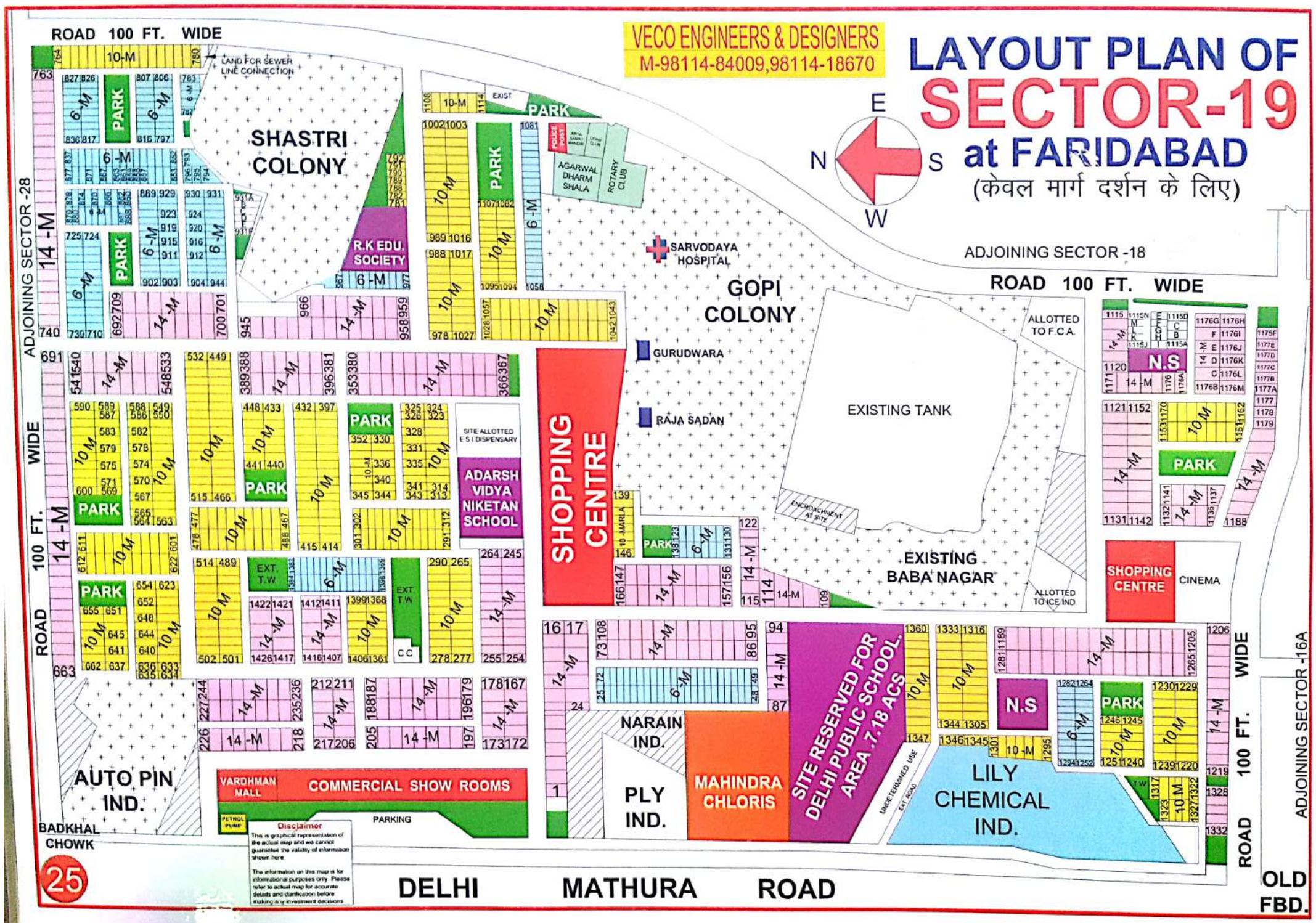

Scanned by CamScanner

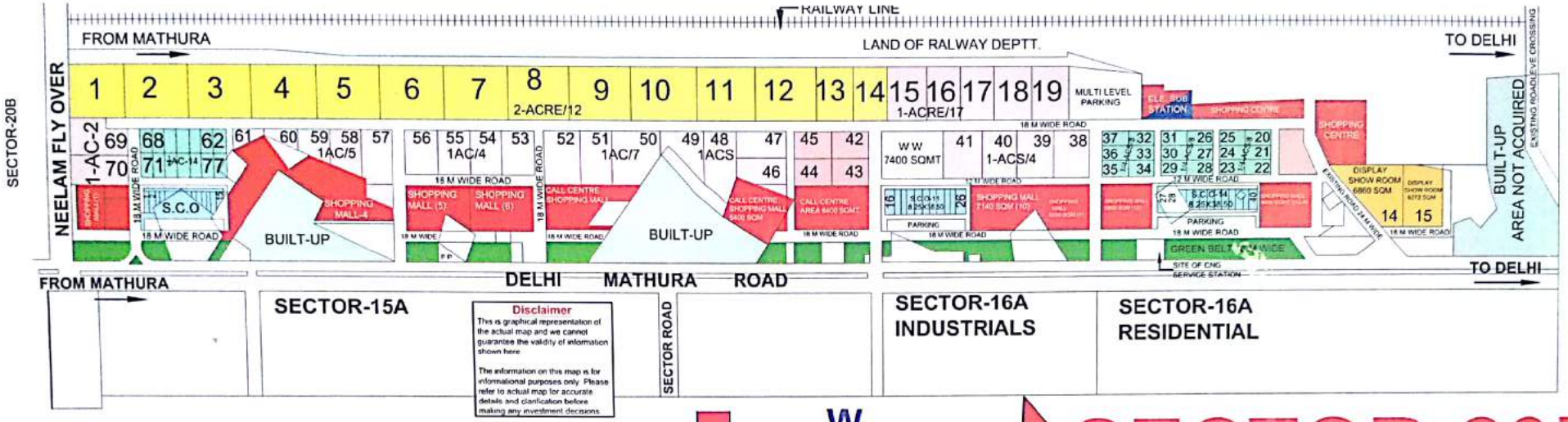

Scanned by CamScanner

LayOut Plan of SECTOR-21 (PART-A) at FARIDABAD (केवल मार्ग दर्शन के लिए)

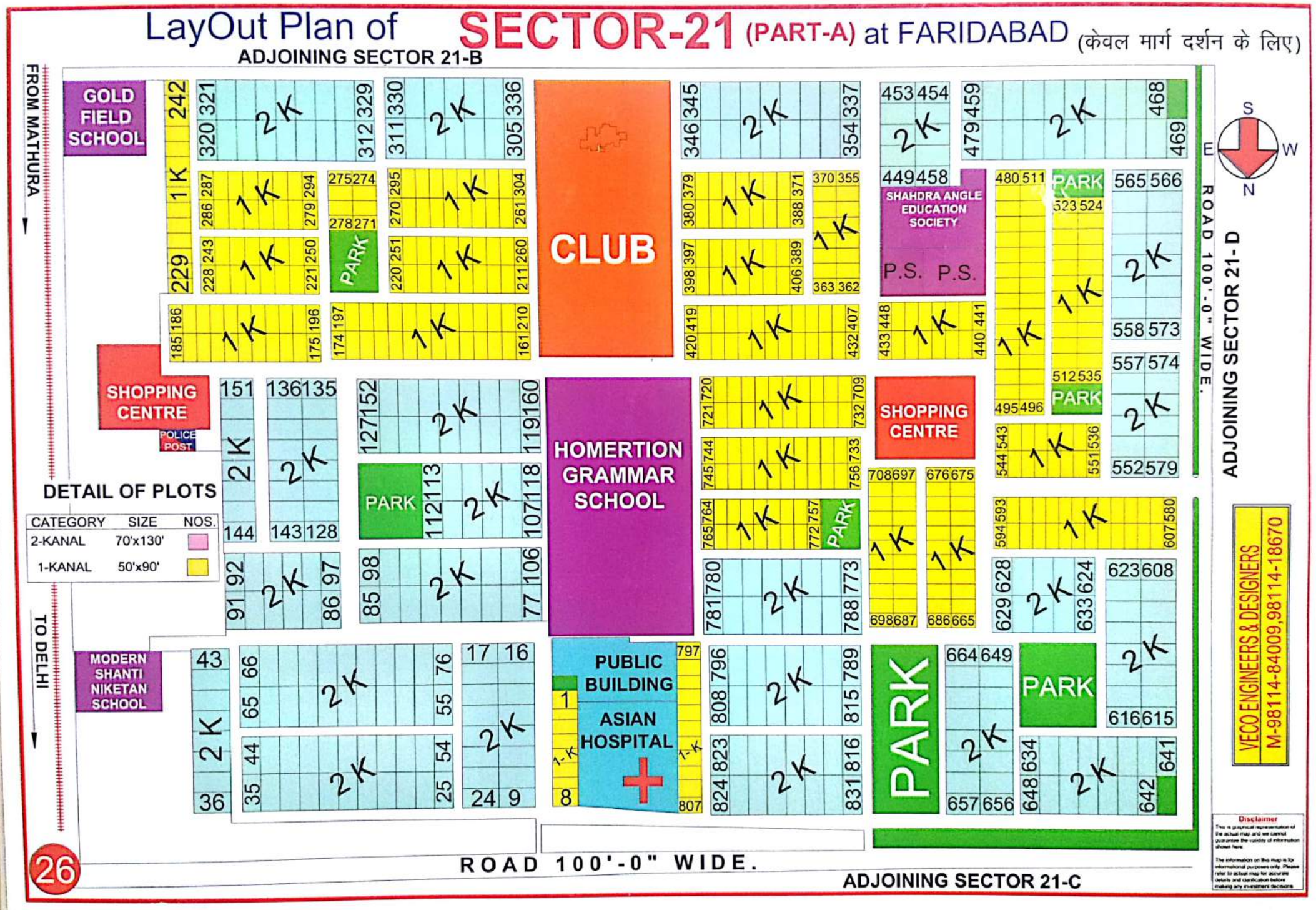

Scanned by CamScanner

LayOut Plan of SECTOR-21 (PART-B) (केवल मार्ग दर्शन के लिए)

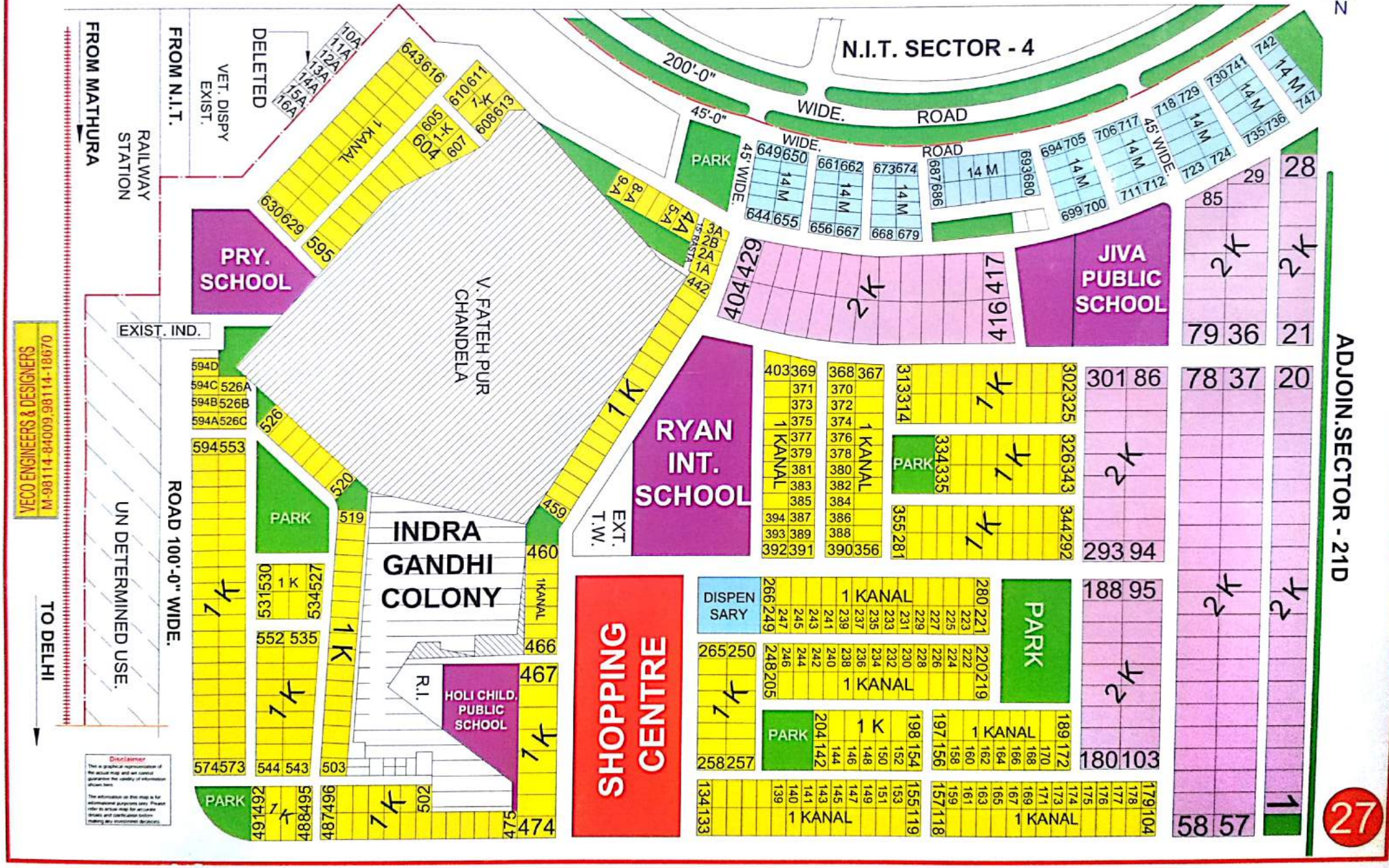

Scanned by CamScanner

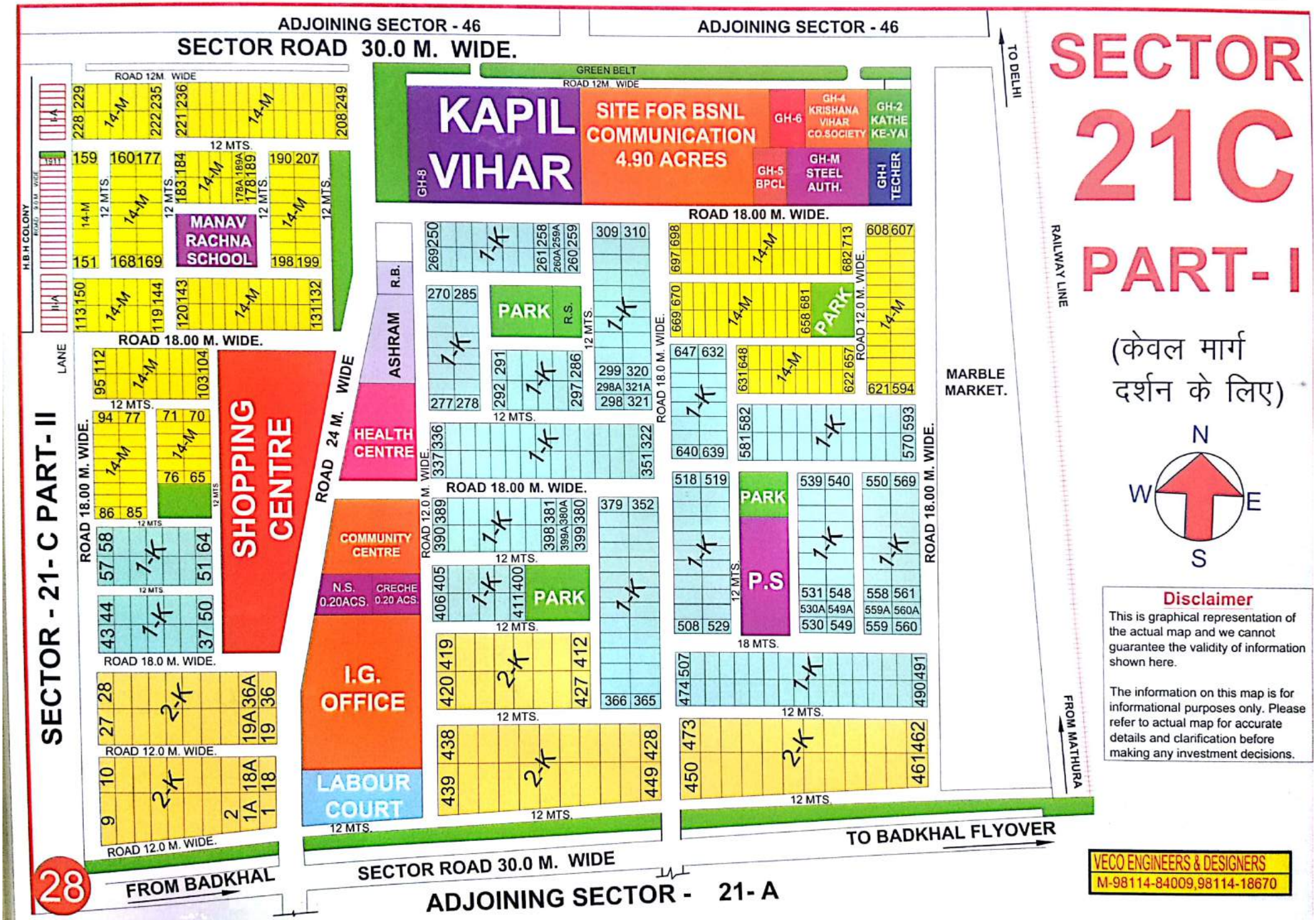

Scanned by CamScanner

LAY OUT PLAN OF SECTOR-21C-II FARIDABAD

(केवल मार्ग दर्शन के लिए)

S.NO.	CATEGORY	SIZE IN MT.	NOS.
1.	1 -KANAL	15 x 28	20
2.	14 -MARLA	12.5 x 25	102
3.	10- MARLA	10.5 x 22	55
	TOTAL	=	177
	H.B.H. FLATS	=	184 NOS.

Disclaimer

This is graphical representation of the actual map and we cannot guarantee the validity of information shown here.

The information on this map is for informational purposes only. Please refer to actual map for accurate details and clarification before making any investment decisions.

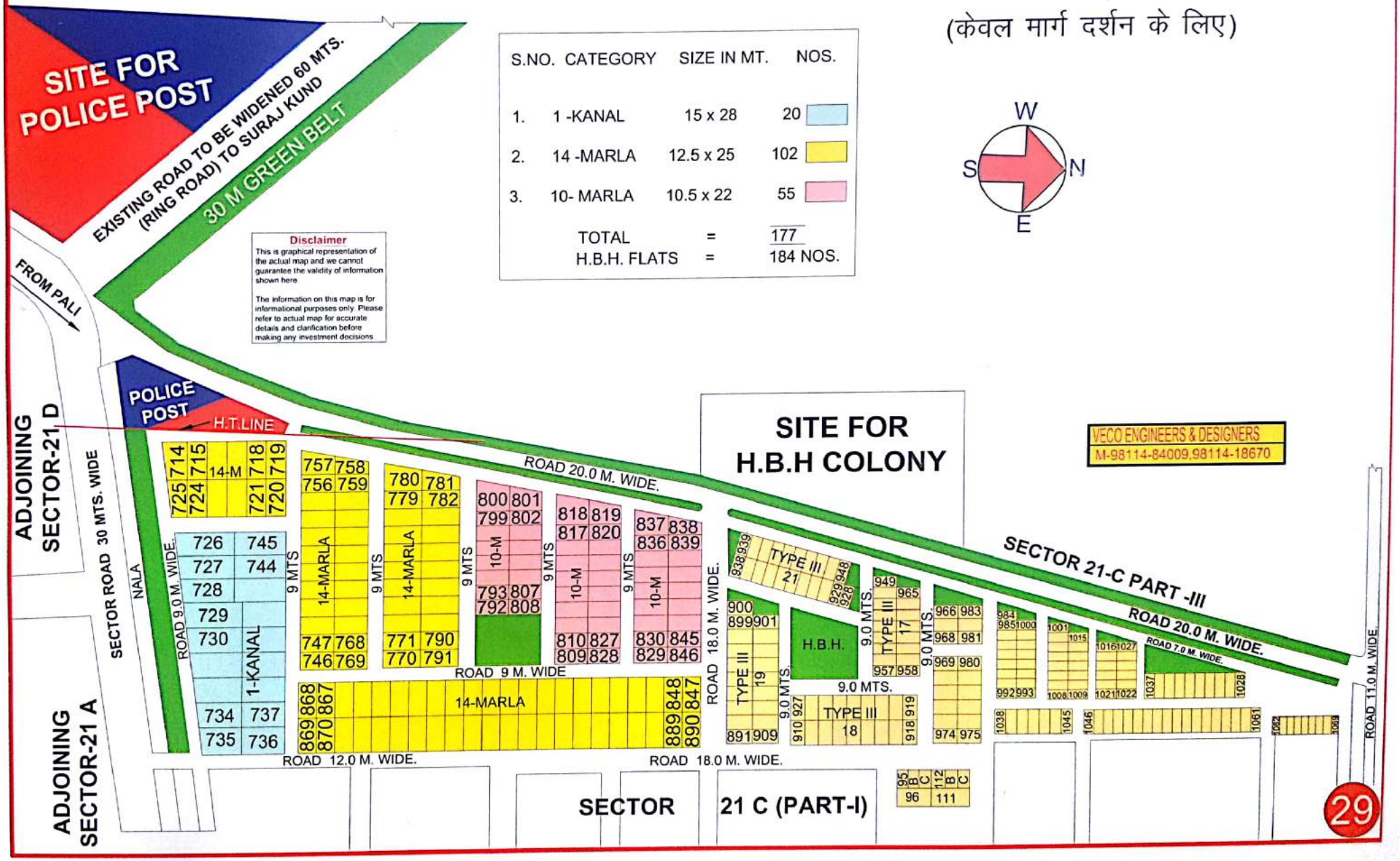

Scanned by CamScanner

LAY OUT PLAN OF SECTOR-21C (III)

(केवल मार्ग दर्शन के लिए)

S.NO.	CATEGORY	SIZE IN FT.	NO. OF PLOTS.
1.	1 -KANAL	14 x 30	84
2.	14 -MARLA	12 x 25	82
		TOTAL =	166

Disclaimer

This is graphical representation of the actual map and we cannot guarantee the validity of information shown here.

The information on this map is for informational purposes only. Please refer to actual map for accurate details and clarification before making any investment decisions.

VECO ENGINEERS & DESIGNERS
M-98114-84009,98114-18670

Scanned by CamScanner

LAY OUT PLAN OF SECTOR-21C (III)

(केवल मार्ग दर्शन के लिए)

S.NO.	CATEGORY	SIZE IN FT.	NO. OF PLOTS.
1.	1 -KANAL	14 x 30	84
2.	14 -MARLA	12 x 25	82
		TOTAL =	166

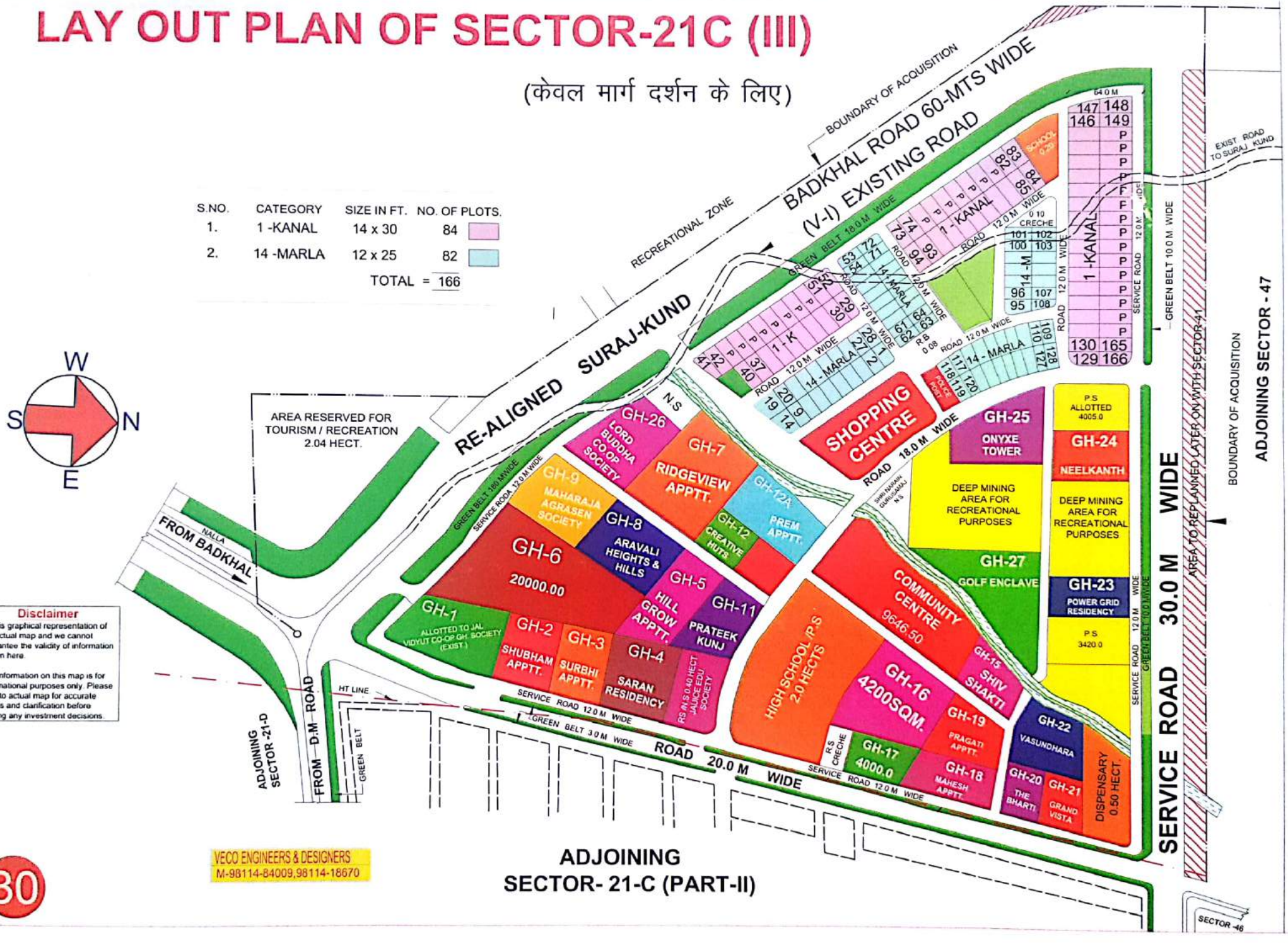

Disclaimer

This is graphical representation of the actual map and we cannot guarantee the validity of information shown here.

The information on this map is for informational purposes only. Please refer to actual map for accurate details and clarification before making any investment decisions.

VECO ENGINEERS & DESIGNERS
M-98114-84009,98114-18670

30

Scanned by CamScanner

SECTOR-21D FARIDABAD

(केवल मार्ग दर्शन के लिए)

CATEGORY	SIZE	NOS. OF PLOTS	
01- KANAL	14 M x 30 M	100	42000.00
14- MARLA	12 M x 25 M	129	38700.00
10- MARLA	9.5 M x 22 M	288	60192.00
6- MARLA	7.5 M x 18 M	385	51975.00
4- MARLA	6 M x 15 M	114	10260.00
2- MARLA	4.5 M x 10 M	363	17968.50
	TOTAL	1379	221095.50

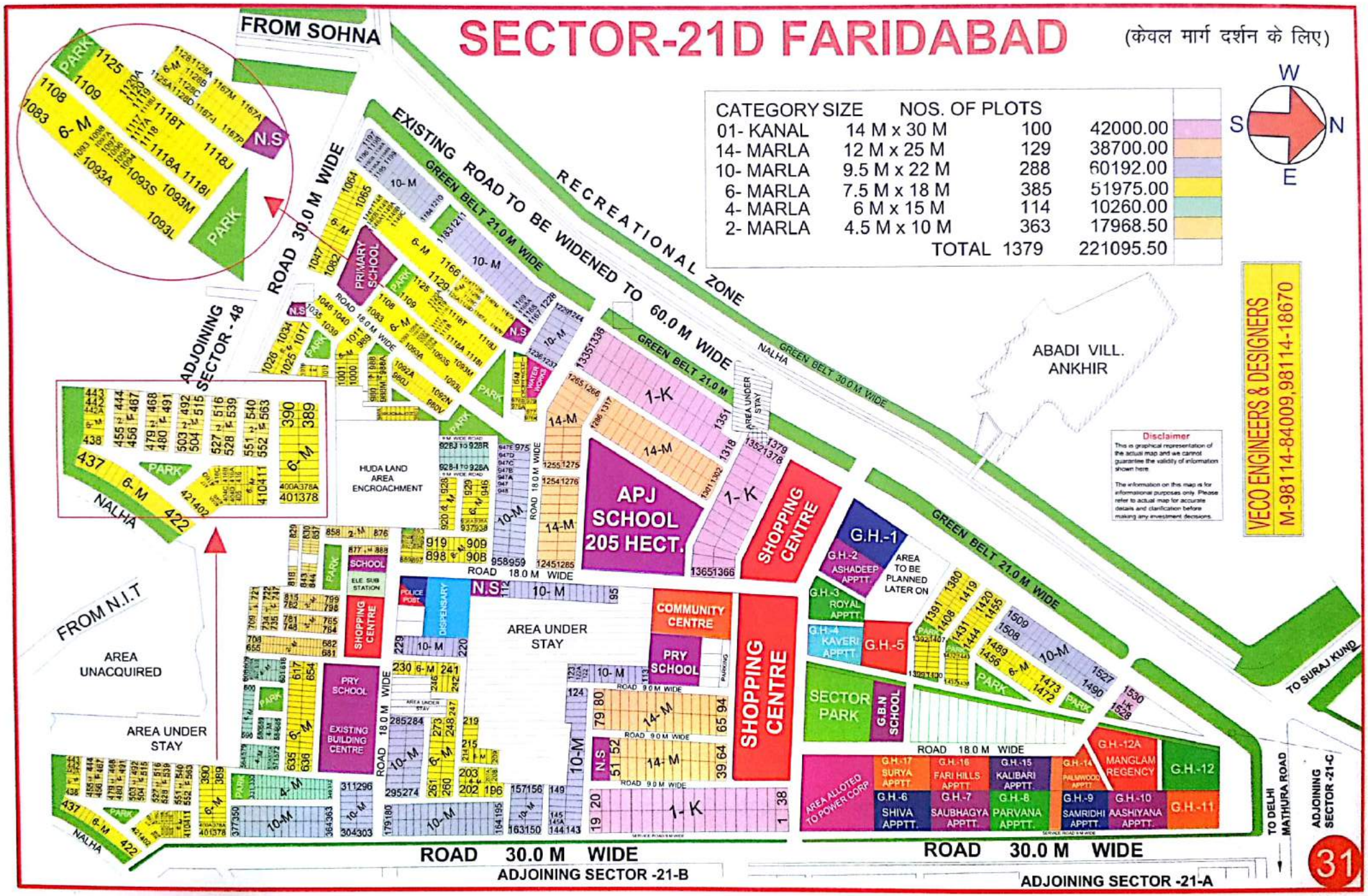

Disclaimer

This is graphical representation of the actual map and we cannot guarantee the validity of information shown here.

The information on this map is for informational purposes only. Please refer to actual map for accurate details and clarification before making any investment decisions.

VECO ENGINEERS & DESIGNERS
M-98114-84009,98114-18670

Scanned by CamScanner

LAY OUT PLAN OF SECTOR - 22 AT FARIDABAD

(केवल मार्ग दर्शन के लिए)

Disclaimer

This is graphical representation of the actual map and we cannot guarantee the validity of information shown here.

The information on this map is for informational purposes only. Please refer to actual map for accurate details and clarification before making any investment decisions.

VECO ENGINEERS & DESIGNERS
M-98114-84009,98114-18670

Scanned by CamScanner

LAY OUT PLAN OF SECTOR-23 FARIDABAD

(केवल मार्ग दर्शन के लिए)

Scanned by CamScanner

LayOut Plan of SECTOR-24 At FARIDABAD

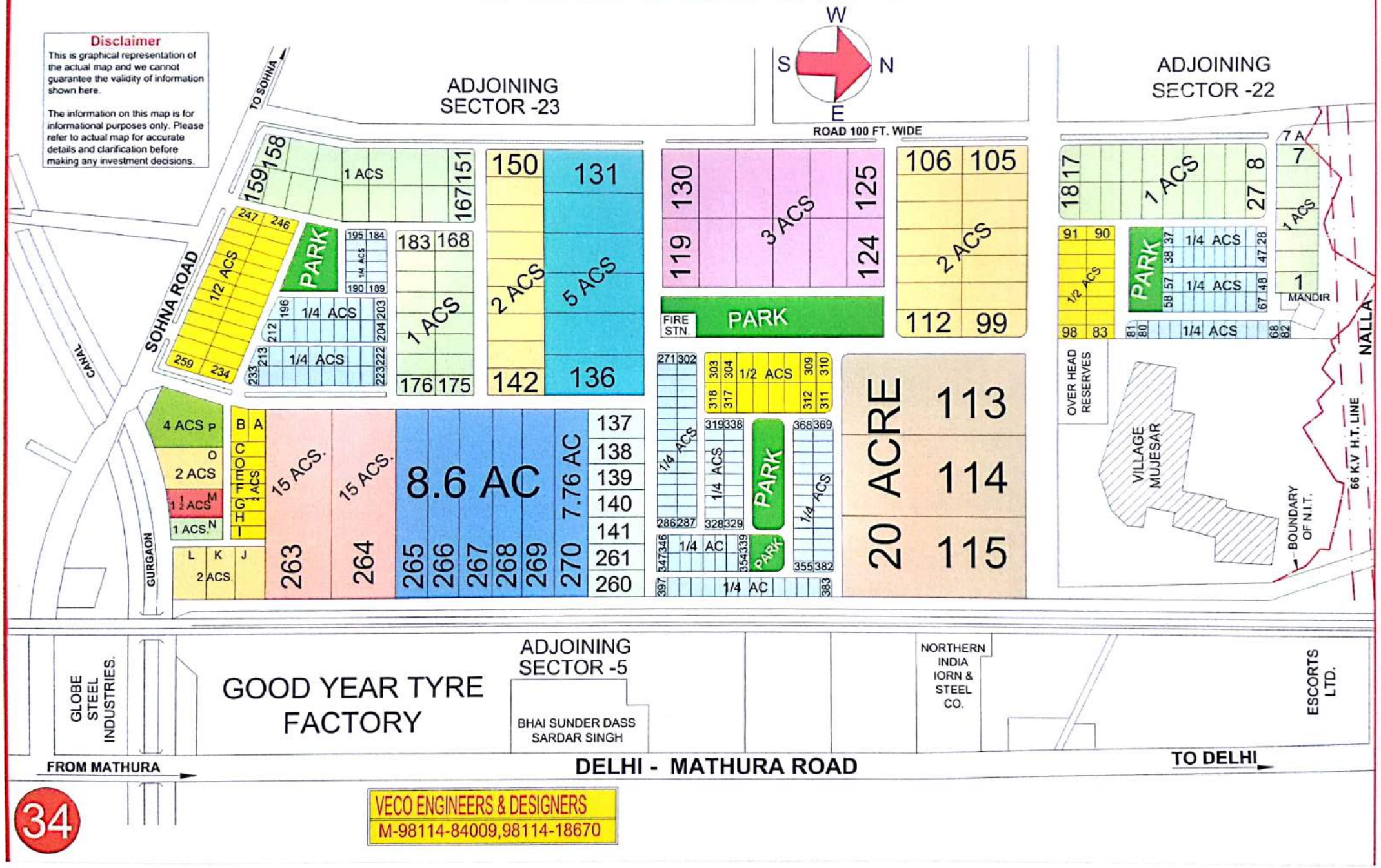

Scanned by CamScanner

LayOut Plan of SECTOR-25 At FARIDABAD

(केवल मार्ग दर्शन के लिए)

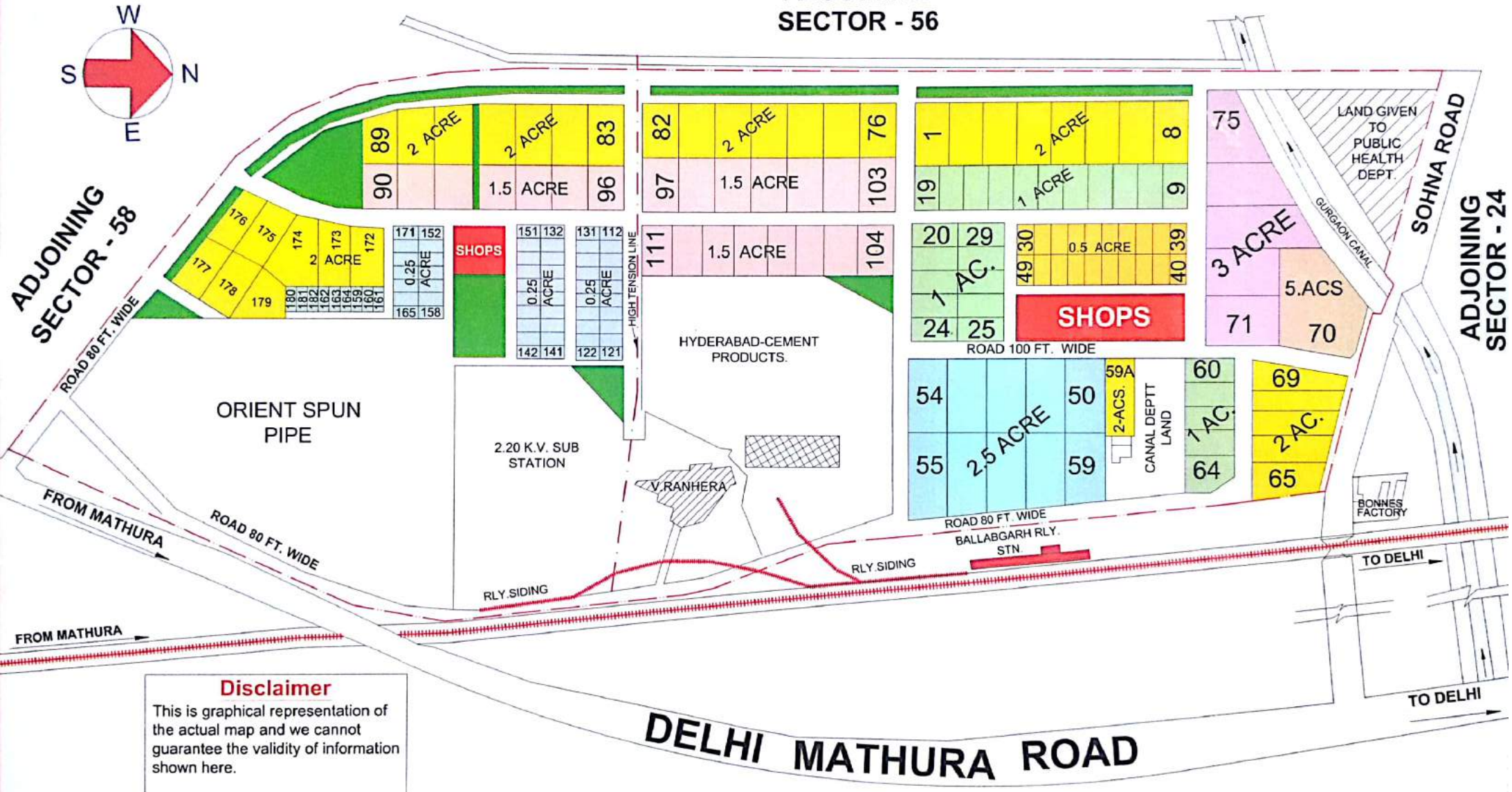

Disclaimer

This is graphical representation of the actual map and we cannot guarantee the validity of information shown here.

The information on this map is for informational purposes only. Please refer to actual map for accurate details and clarification before making any investment decisions.

VECO ENGINEERS & DESIGNERS
M-98114-84009,98114-18670

Scanned by CamScanner

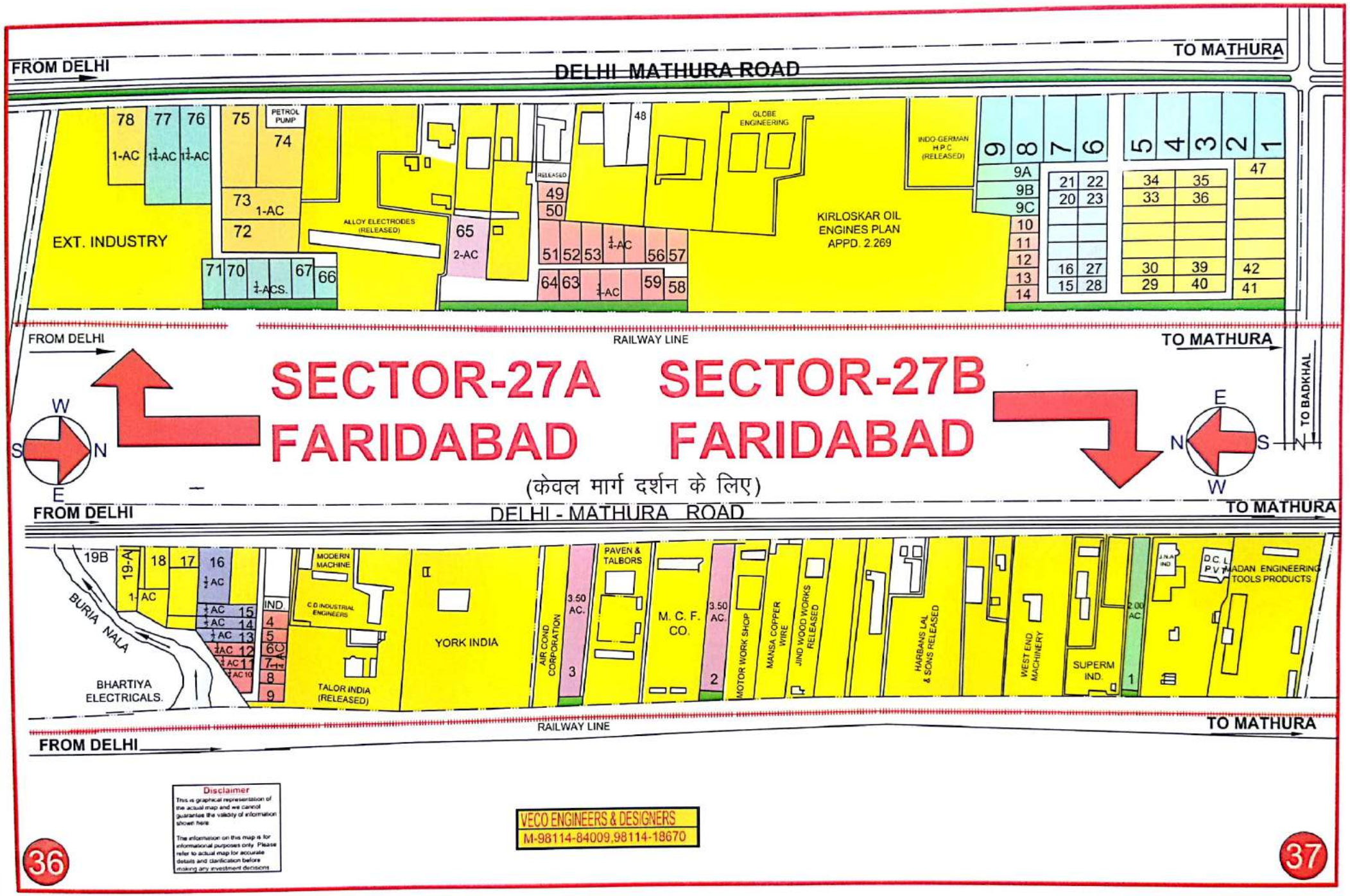

Scanned by CamScanner

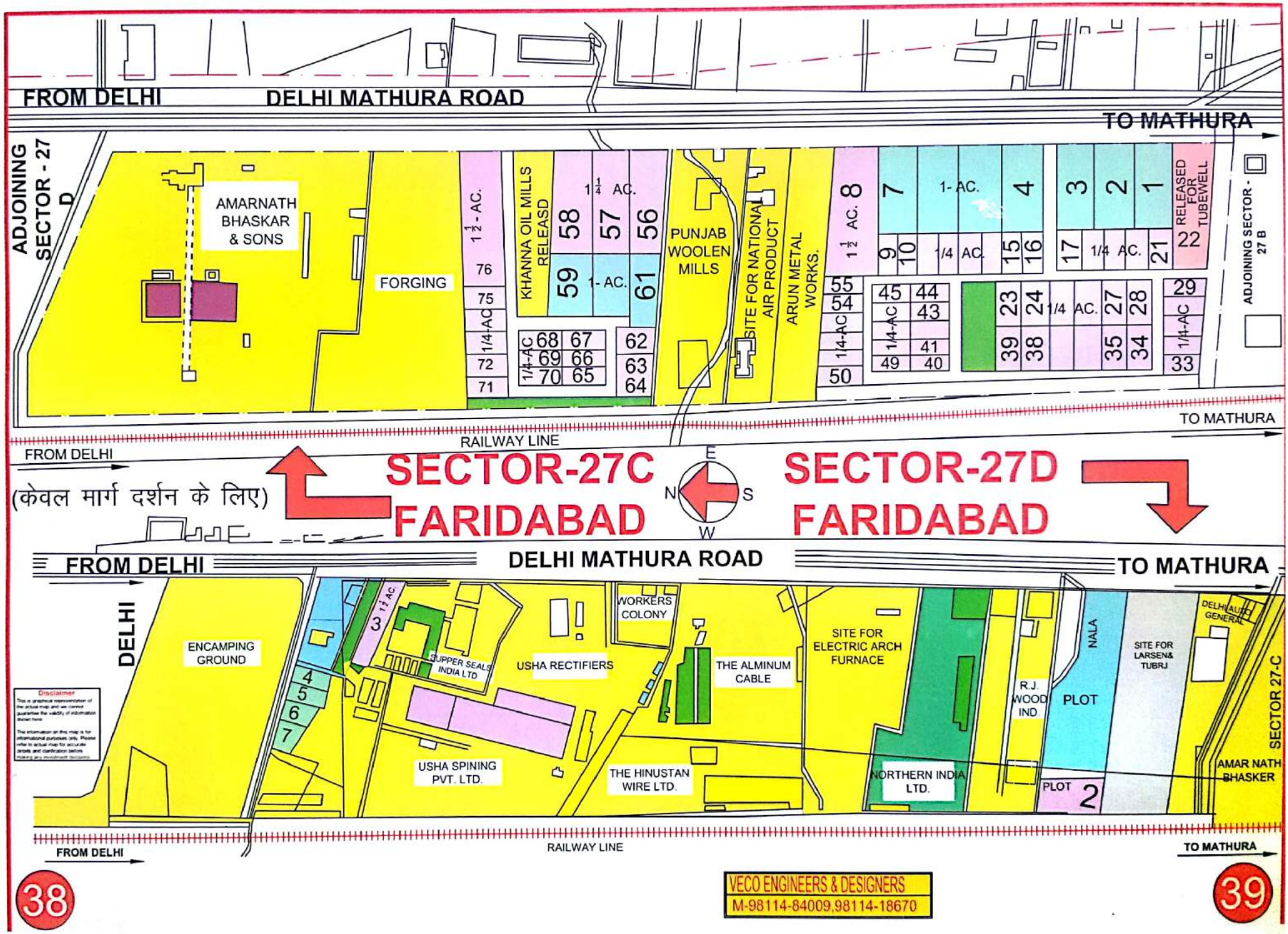

Scanned by CamScanner

Scanned by CamScanner

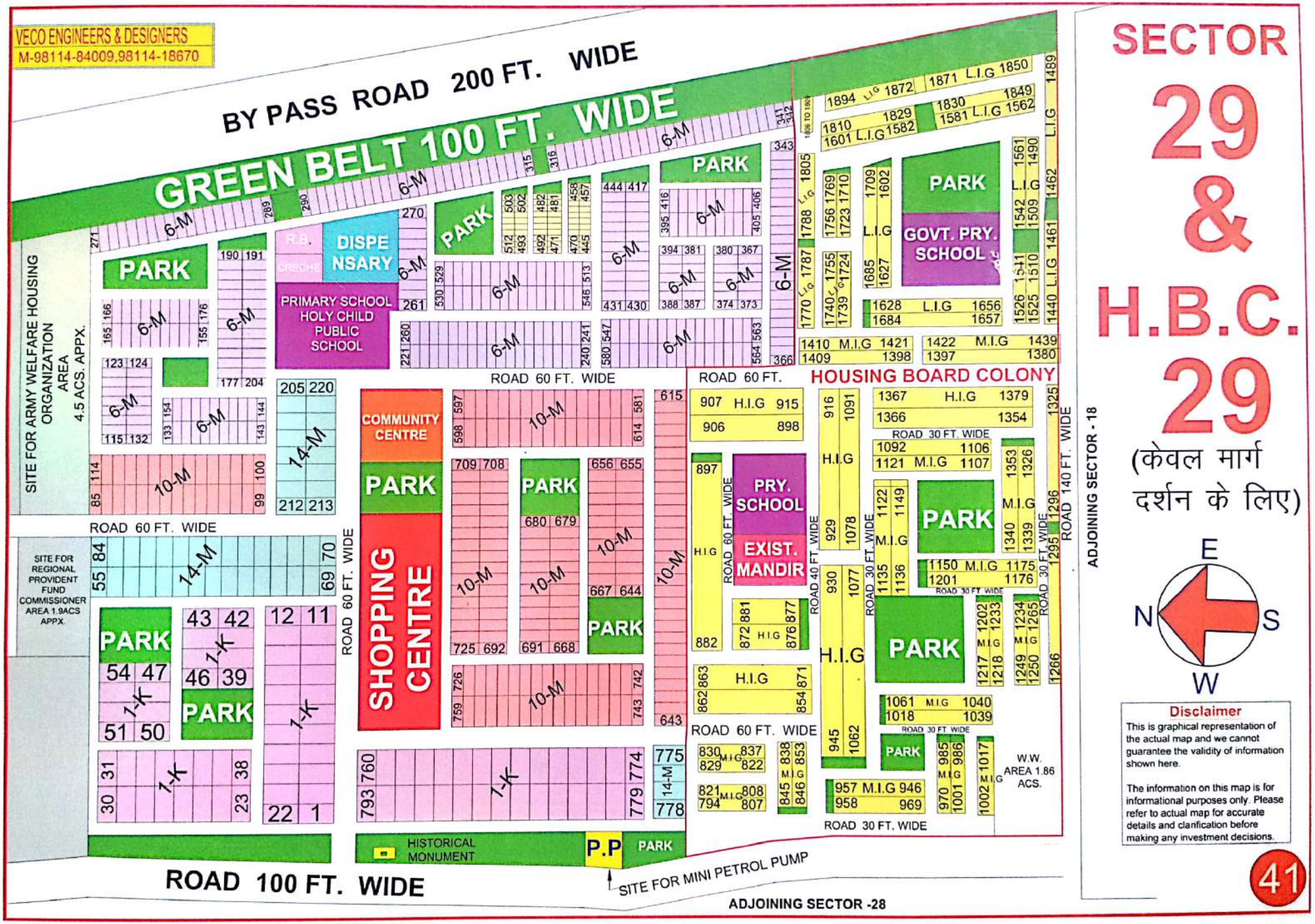

Scanned by CamScanner

SECTOR 30

DETAIL OF PLOTS :-

S.NO.	CATEGORY	SIZE IN MTS.	NOS.
1.	10- MARLA	9.50 x 22.00	99
2.	6- MARLA	7.70 x 18.00	243
3.	4- MARLA	5.50 x 15.20	240
4.	2- MARLA	4.50 x 11.50	157
		TOTAL =	739

(केवल मार्ग दर्शन के लिए)

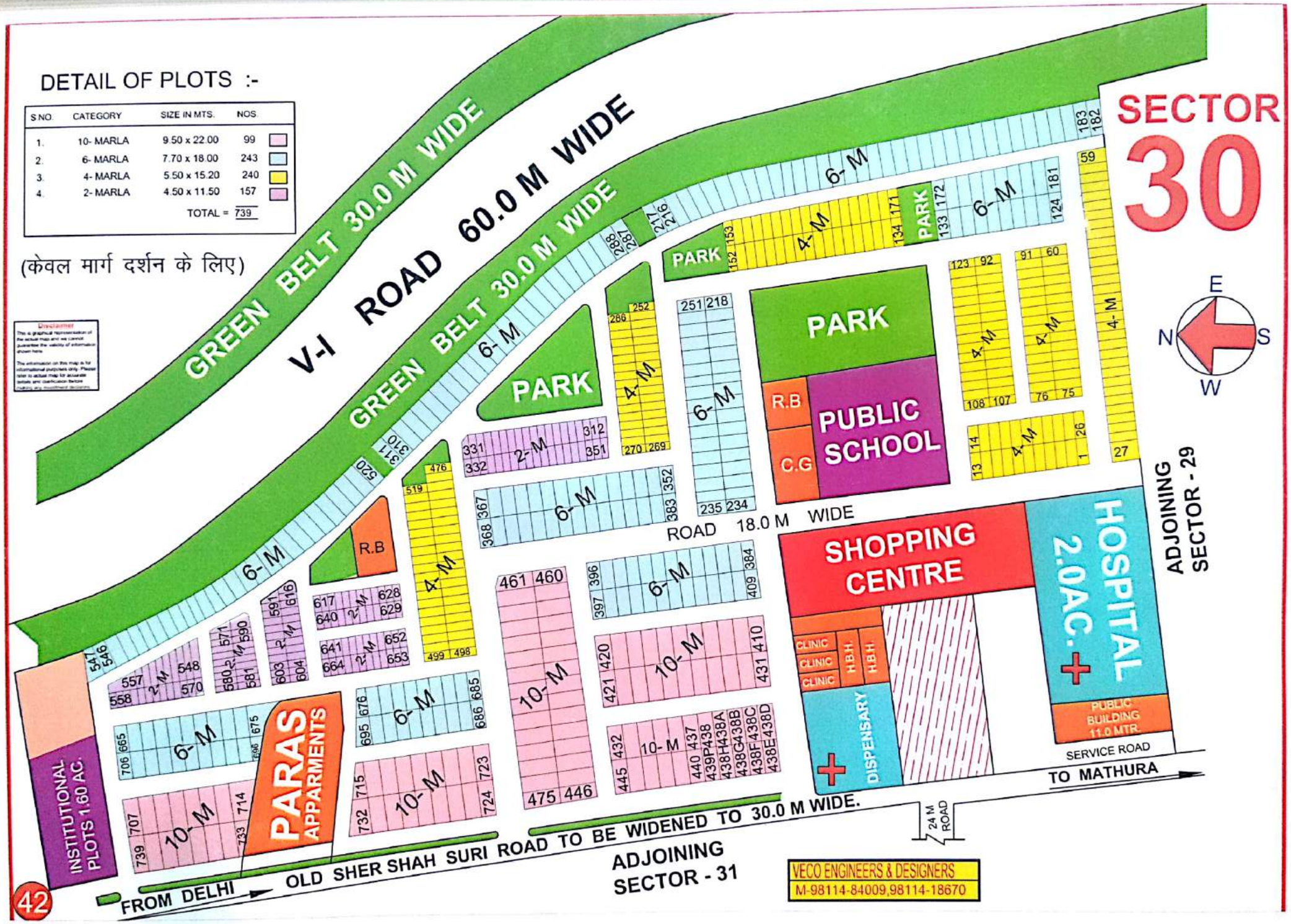

Scanned by CamScanner

SECTOR-31 FARIDABAD

(केवल मार्ग दर्शन के लिए)

DETAIL OF PLOTS :-

CATEGORY	SIZE IN MTS.	NOS.
1 -KANAL	15.0 x 28.0	135
14 -MARLA	12.0 x 25.0	122
10 -MARLA	9.5 x 22.0	342
4 -MARLA	5.5 x 15.2	288
2 -MARLA	4.5 x 11.5	108
	TOTAL =	1193

Scanned by CamScanner

Scanned by CamScanner

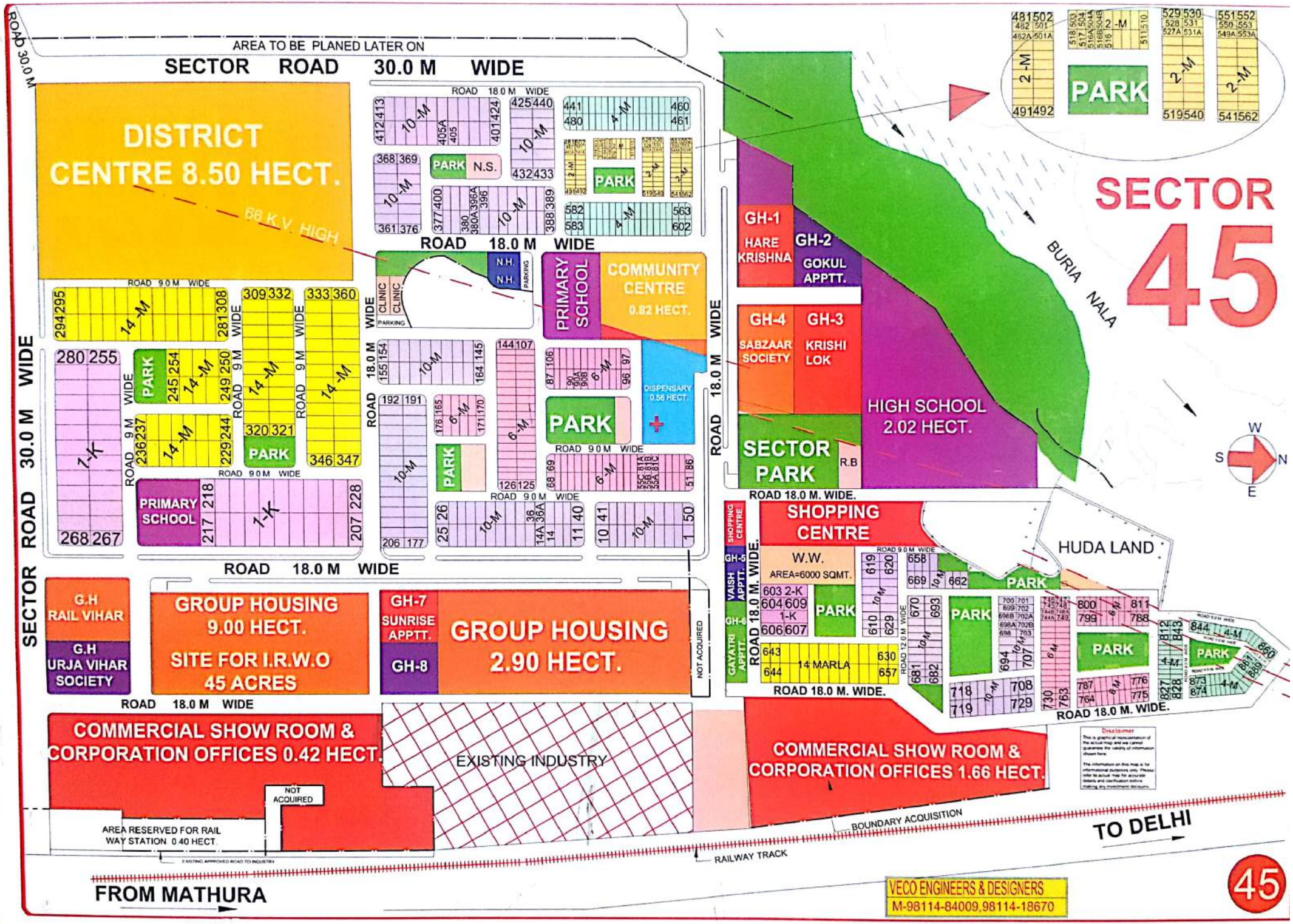

Scanned by CamScanner

SECTOR- 46 FARIDABAD

(केवल मार्ग दर्शन के लिए)

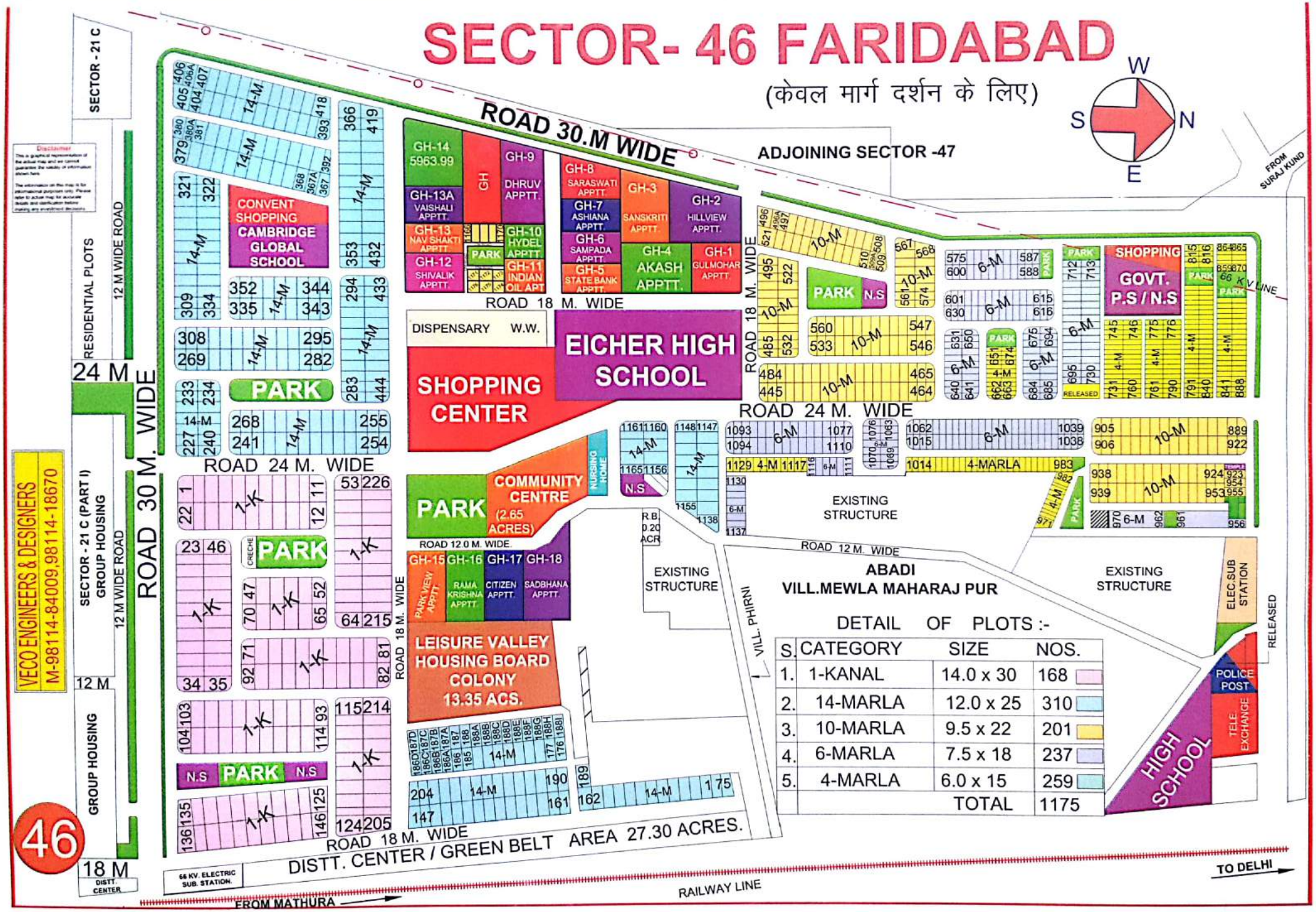

DETAIL OF PLOTS :-

S.	CATEGORY	SIZE	NOS.
1.	1-KANAL	14.0 x 30	168
2.	14-MARLA	12.0 x 25	310
3.	10-MARLA	9.5 x 22	201
4.	6-MARLA	7.5 x 18	237
5.	4-MARLA	6.0 x 15	259
		TOTAL	1175

Scanned by CamScanner

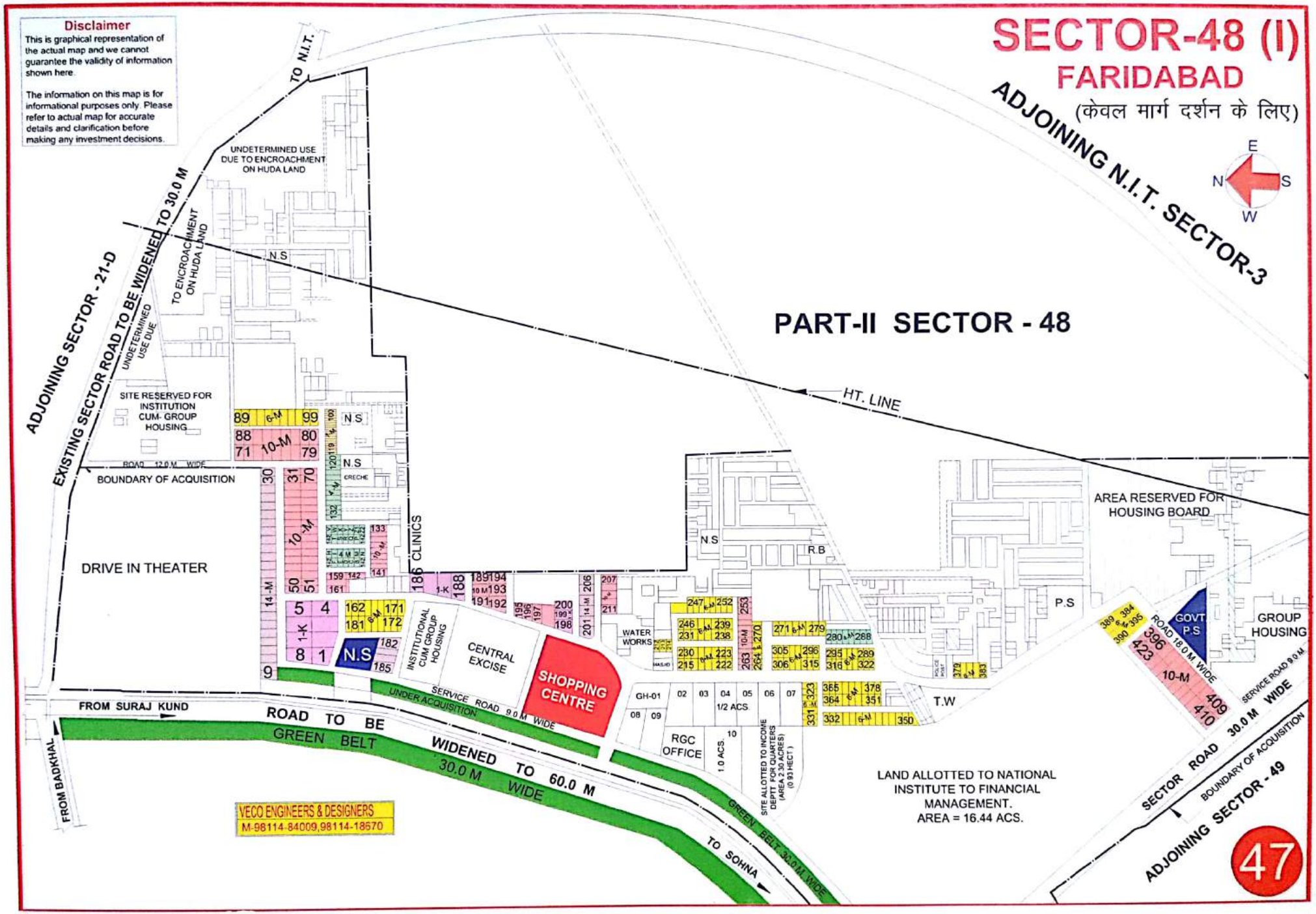

Scanned by CamScanner

Scanned by CamScanner

LAY OUT PLAN OF SECTOR- 55 FARIDABAD

(केवल मार्ग दर्शन के लिए)

S.NO.	CATEGORY	SIZE IN MTS.	NO. OF PLOTS.
1.	14-MARLA	13.0 x 23.0	129
2.	10-MARLA	9.50 x 22.0	237
3.	6- MARLA	7.50 x 18.0	504
4.	4- MARLA	5.50 x 15.5	418
5.	2- MARLA	4.50 x 11.0	450
		TOTAL =	1738

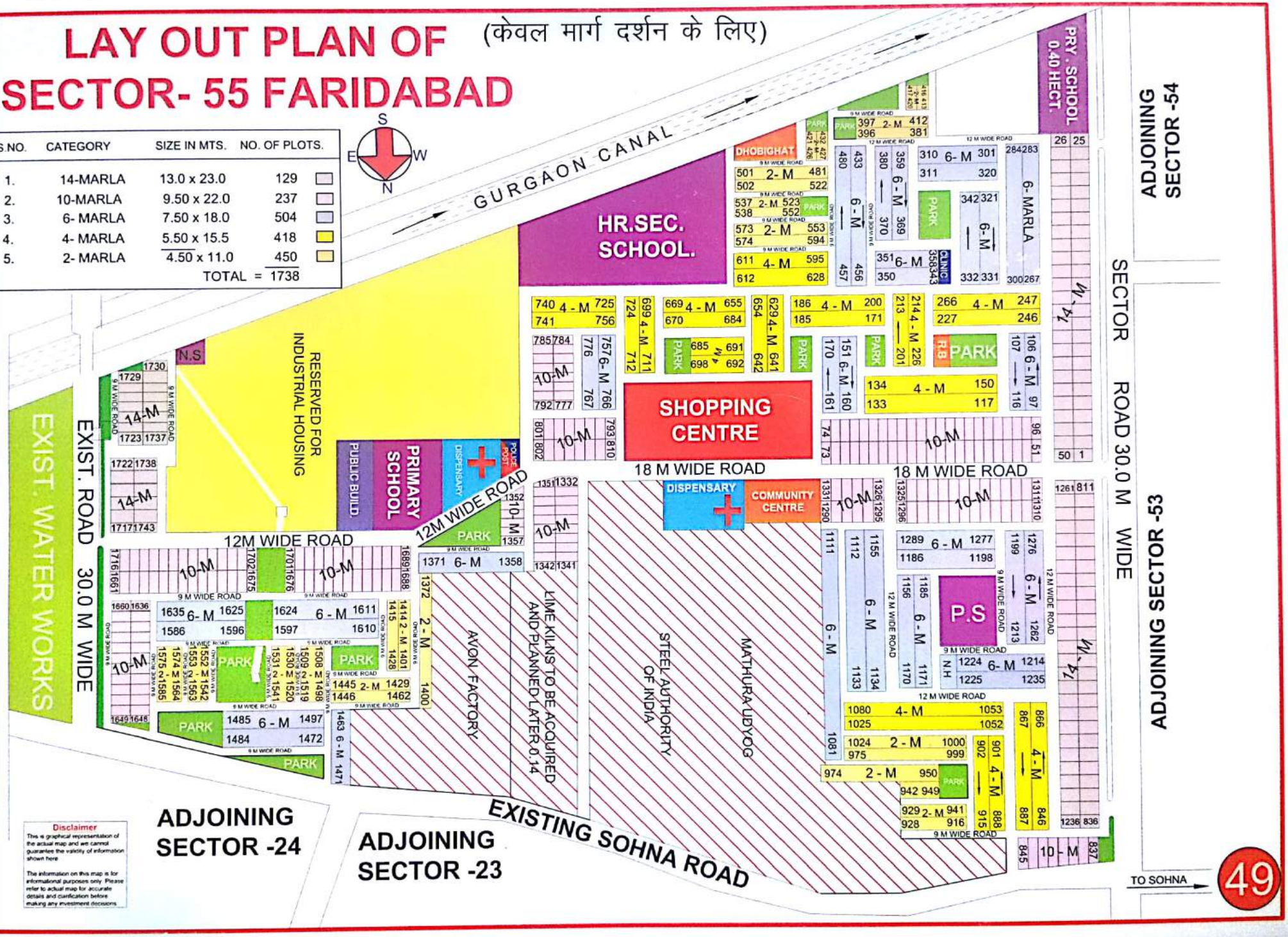

Scanned by CamScanner

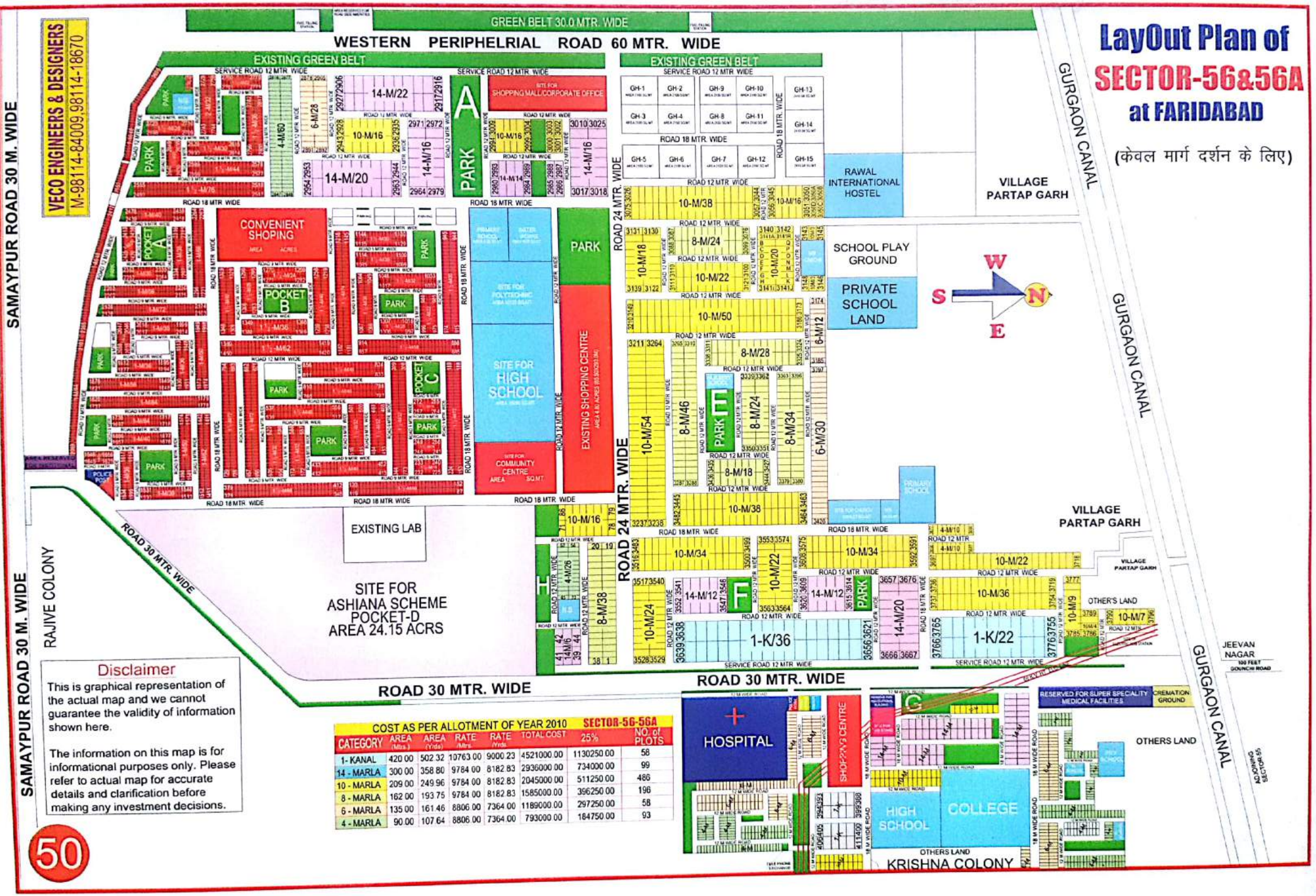

Scanned by CamScanner

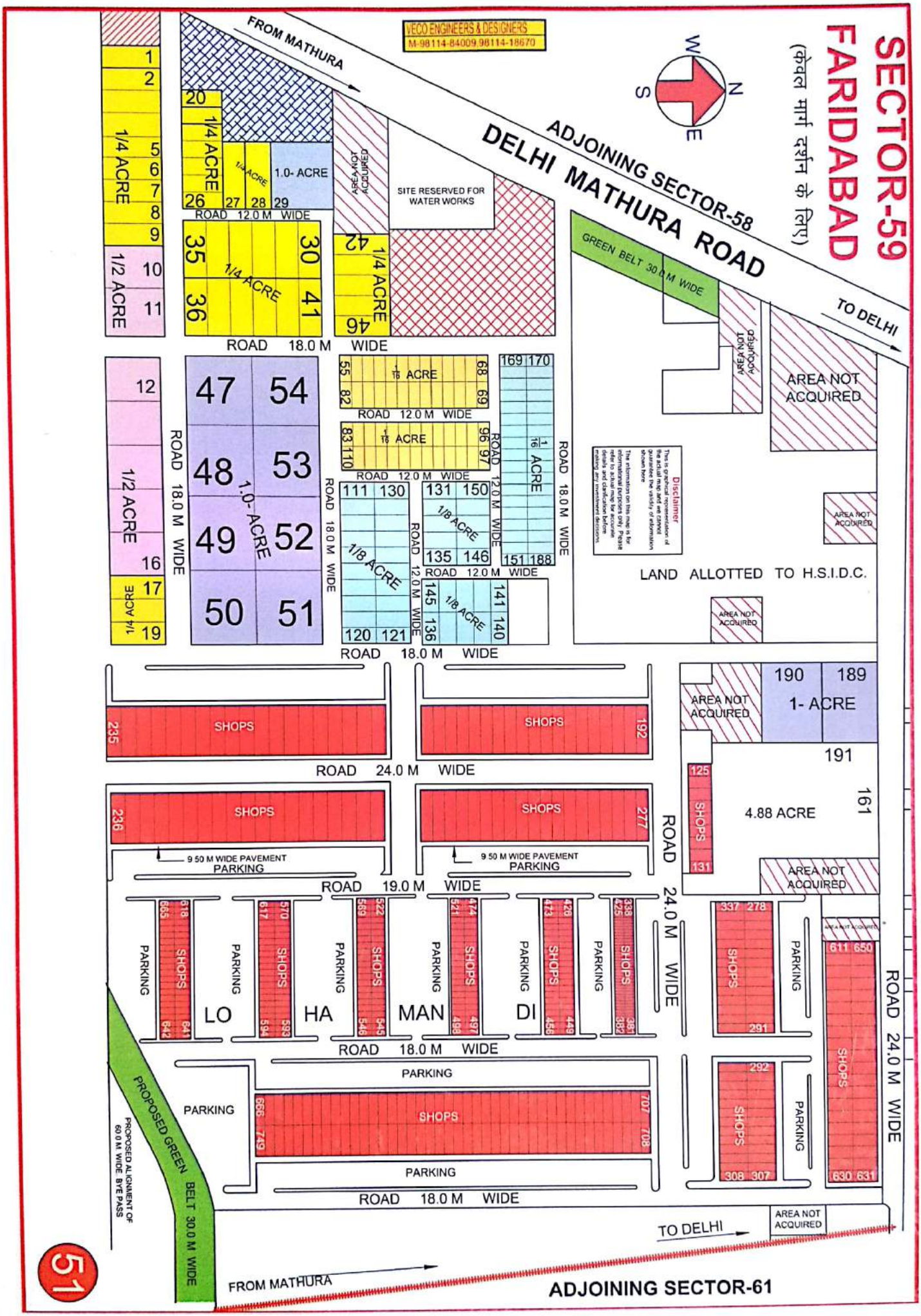

Scanned by CamScanner

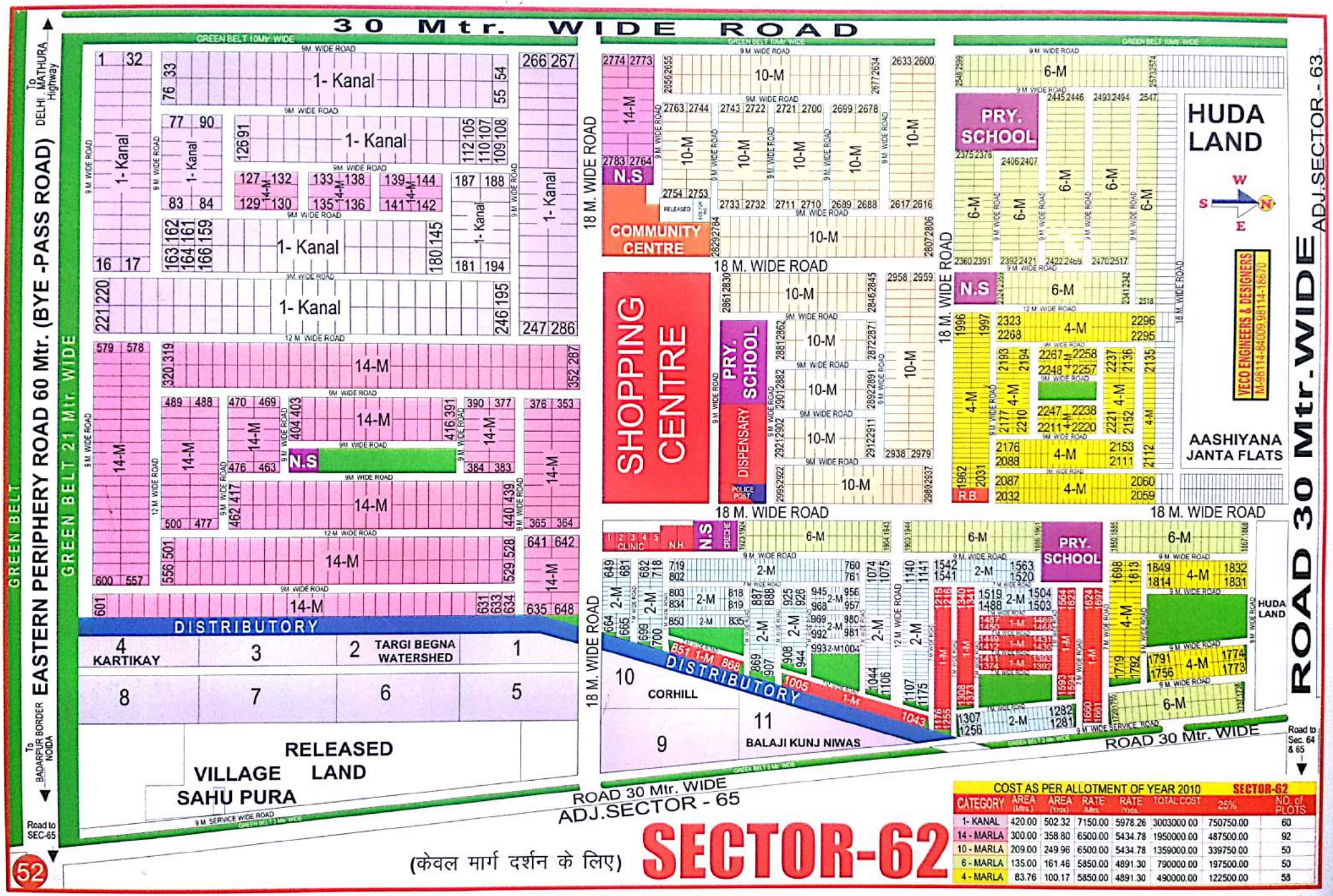

COST AS PER ALLOTMENT OF YEAR 2010 — SECTOR-62

CATEGORY	AREA (Mtrs.)	AREA (Yrds)	RATE /Mtrs.	RATE /Yrds.	TOTAL COST	25%	NO. of PLOTS
1- KANAL	420.00	502.32	7150.00	5978.26	3003000.00	750750.00	60
14 - MARLA	300.00	358.80	6500.00	5434.78	1950000.00	487500.00	92
10 - MARLA	209.00	249.96	6500.00	5434.78	1359000.00	339750.00	50
6 - MARLA	135.00	161.46	5850.00	4891.30	790000.00	197500.00	50
4 - MARLA	83.76	100.17	5850.00	4891.30	490000.00	122500.00	58

Scanned by CamScanner

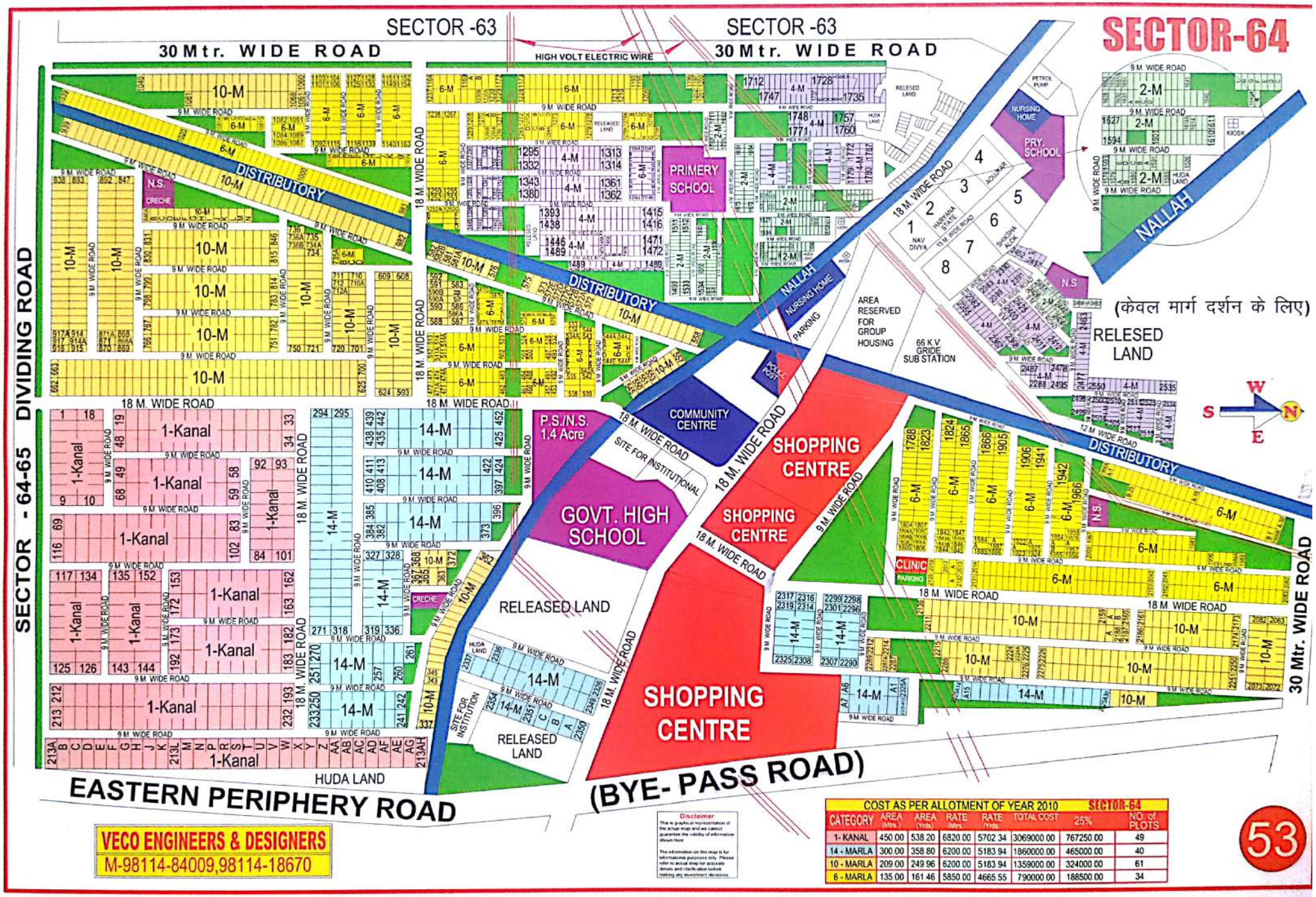

COST AS PER ALLOTMENT OF YEAR 2010							SECTOR-64
CATEGORY	AREA (Mtrs.)	AREA (Yrds)	RATE (Mtrs.)	RATE (Yrds.)	TOTAL COST	25%	NO. of PLOTS
1- KANAL	450.00	538.20	6820.00	5702.34	3069000.00	767250.00	49
14 - MARLA	300.00	358.80	6200.00	5183.94	1860000.00	465000.00	40
10 - MARLA	209.00	249.96	6200.00	5183.94	1359000.00	324000.00	61
6 - MARLA	135.00	161.46	5850.00	4665.55	790000.00	188500.00	34

Disclaimer

This is graphical representation of the actual map and we cannot guarantee the validity of information shown here.

The information on this map is for informational purposes only. Please refer to actual map for accurate details and clarification before making any investment decisions.

VECO ENGINEERS & DESIGNERS
M-98114-84009,98114-18670

Scanned by CamScanner

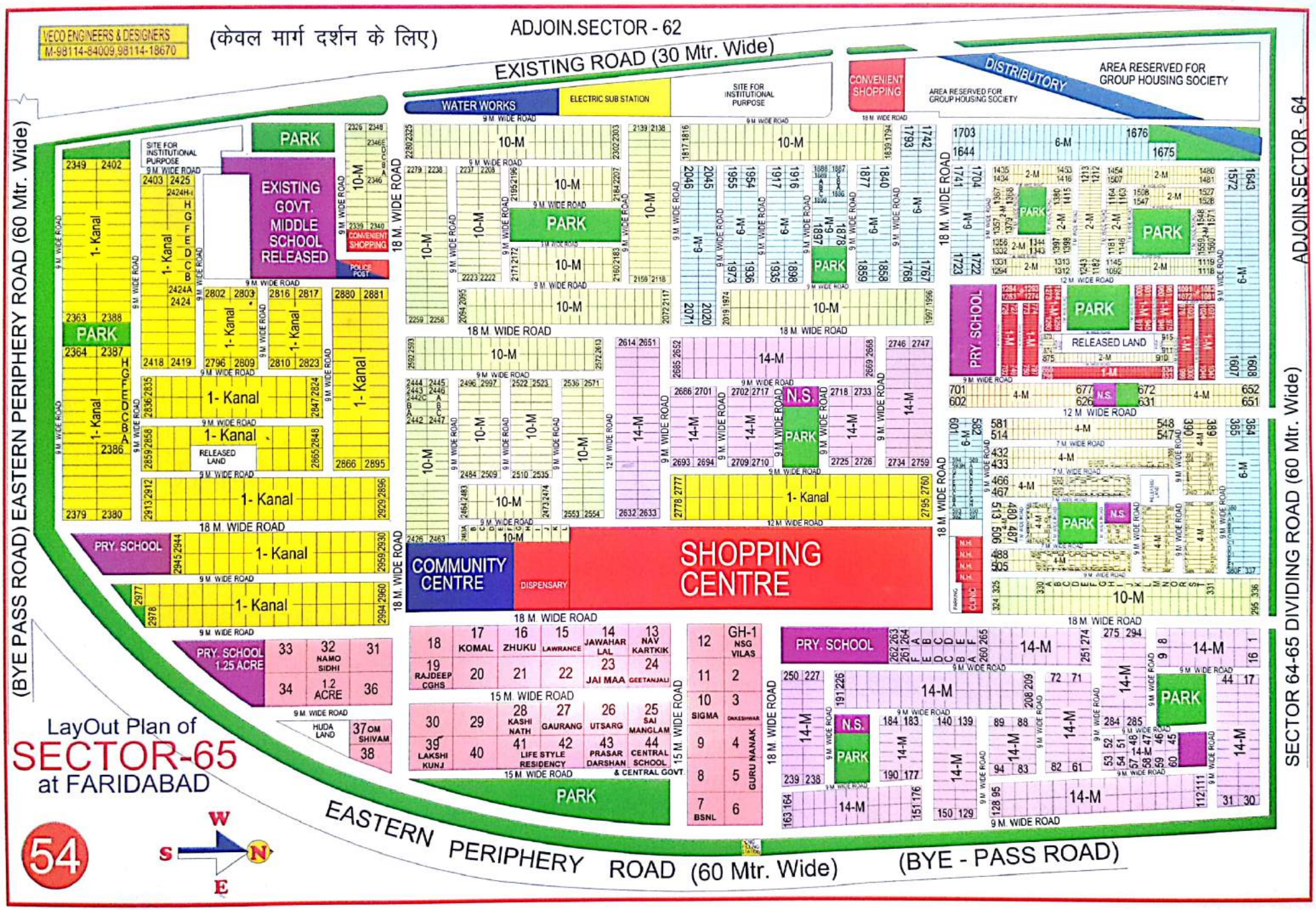

Scanned by CamScanner

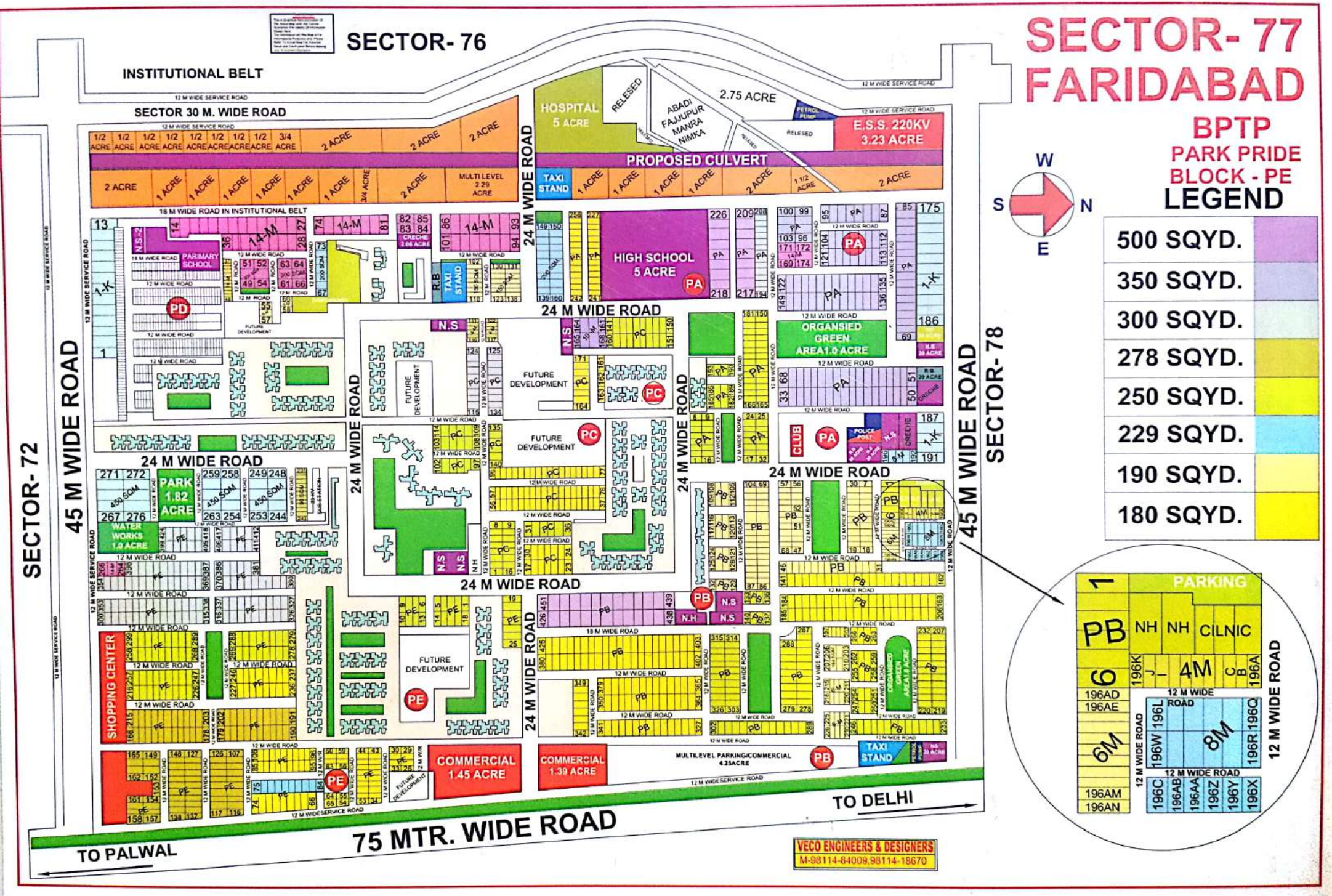

Scanned by CamScanner

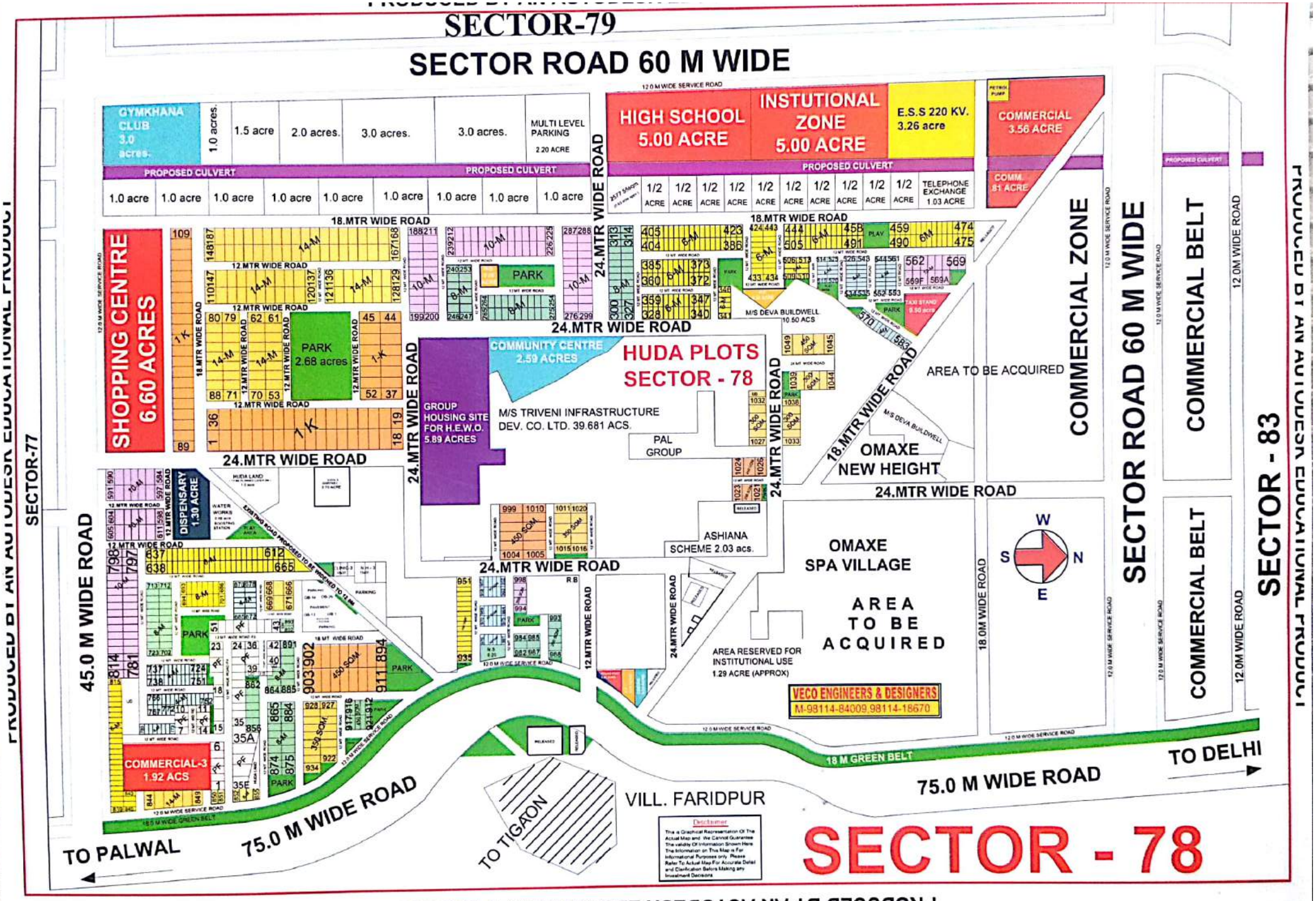

Scanned by CamScanner

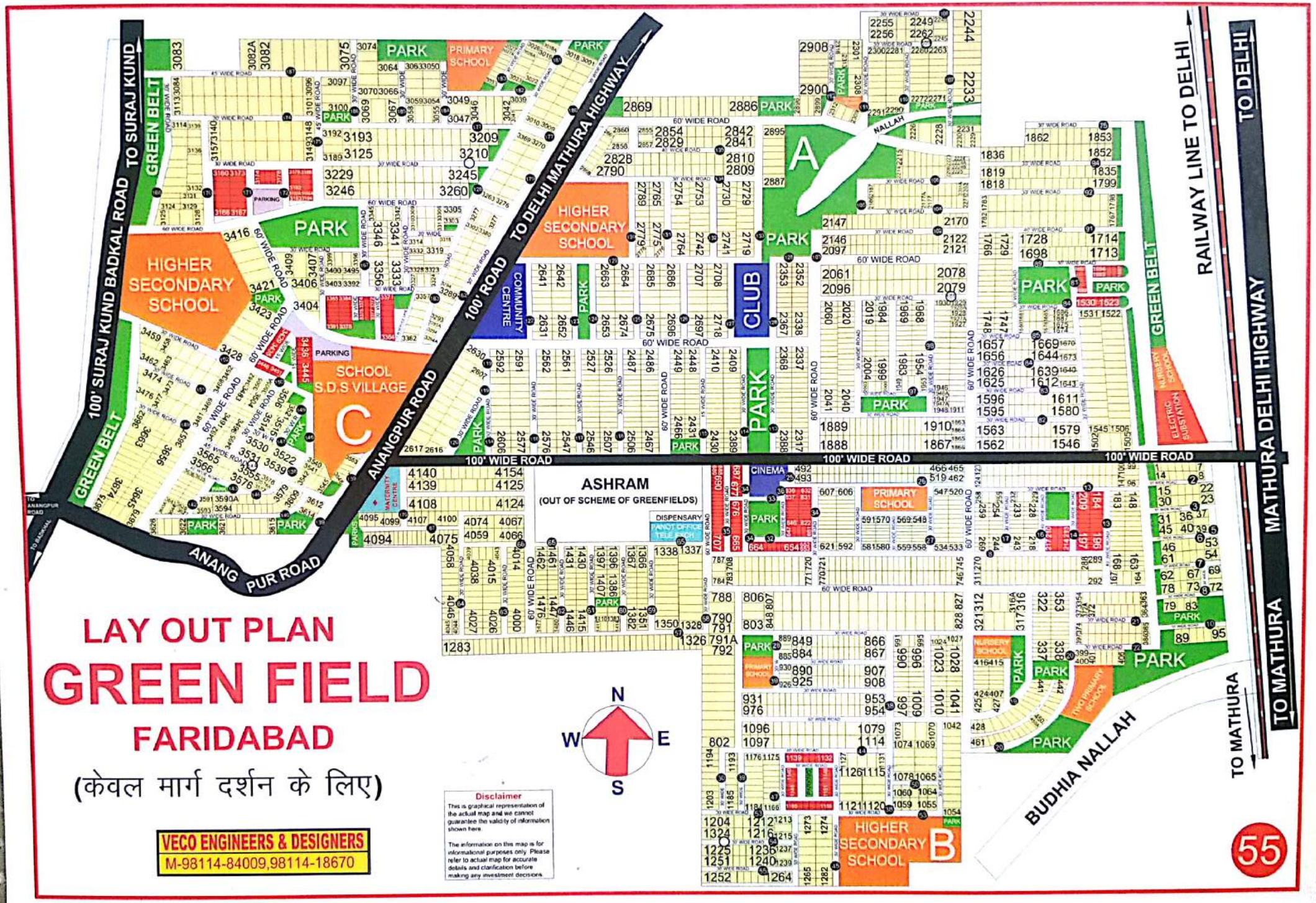

Scanned by CamScanner

LAY OUT PLAN OF

SURYA NAGAR (PHASE-I)

(केवल मार्ग दर्शन के लिए)

Disclaimer

This is graphical representation of the actual map and we cannot guarantee the validity of information shown here

The information on this map is for informational purposes only. Please refer to actual map for accurate details and clarification before making any investment decisions.

VECO ENGINEERS & DESIGNERS
M-98114-84009,98114-18670

Scanned by CamScanner

LAY OUT PLAN OF SURYA NAGAR (PHASE-II) AT FARIDABAD

(केवल मार्ग दर्शन के लिए)

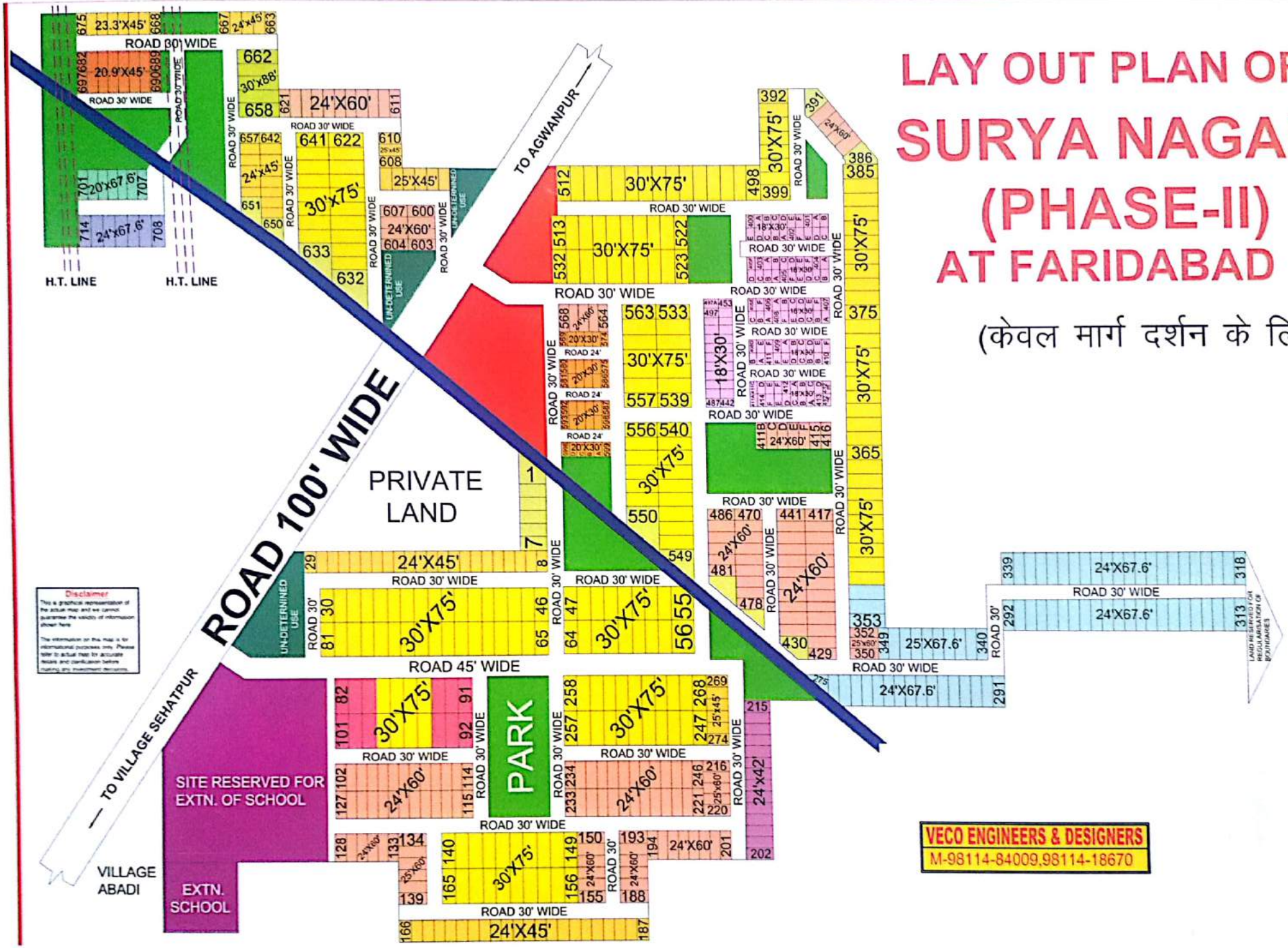

VECO ENGINEERS & DESIGNERS
M-98114-84009,98114-18670

Scanned by CamScanner

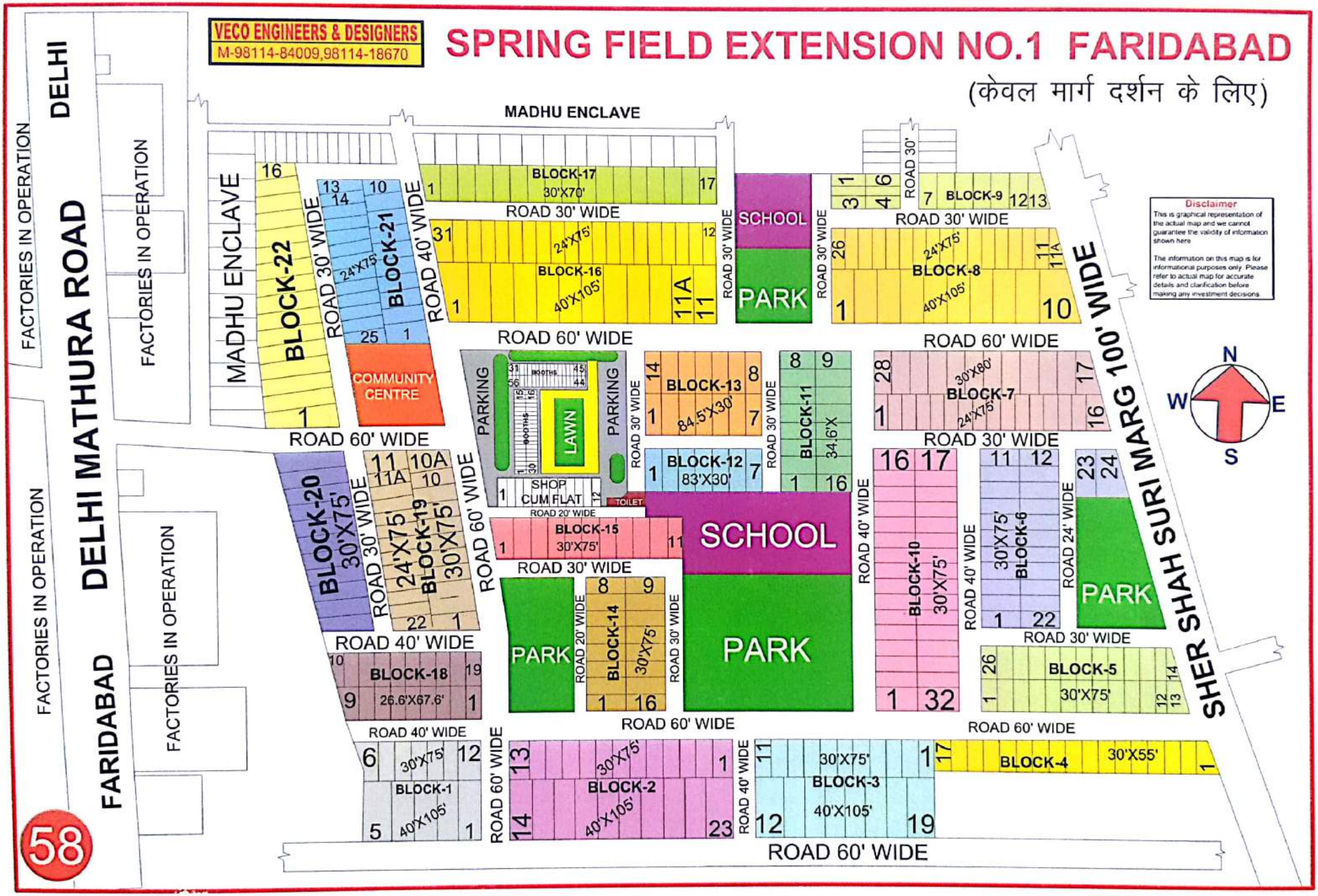

Scanned by CamScanner

LAY OUT PLAN OF

DLF AT FARIDABAD

(केवल मार्ग दर्शन के लिए)

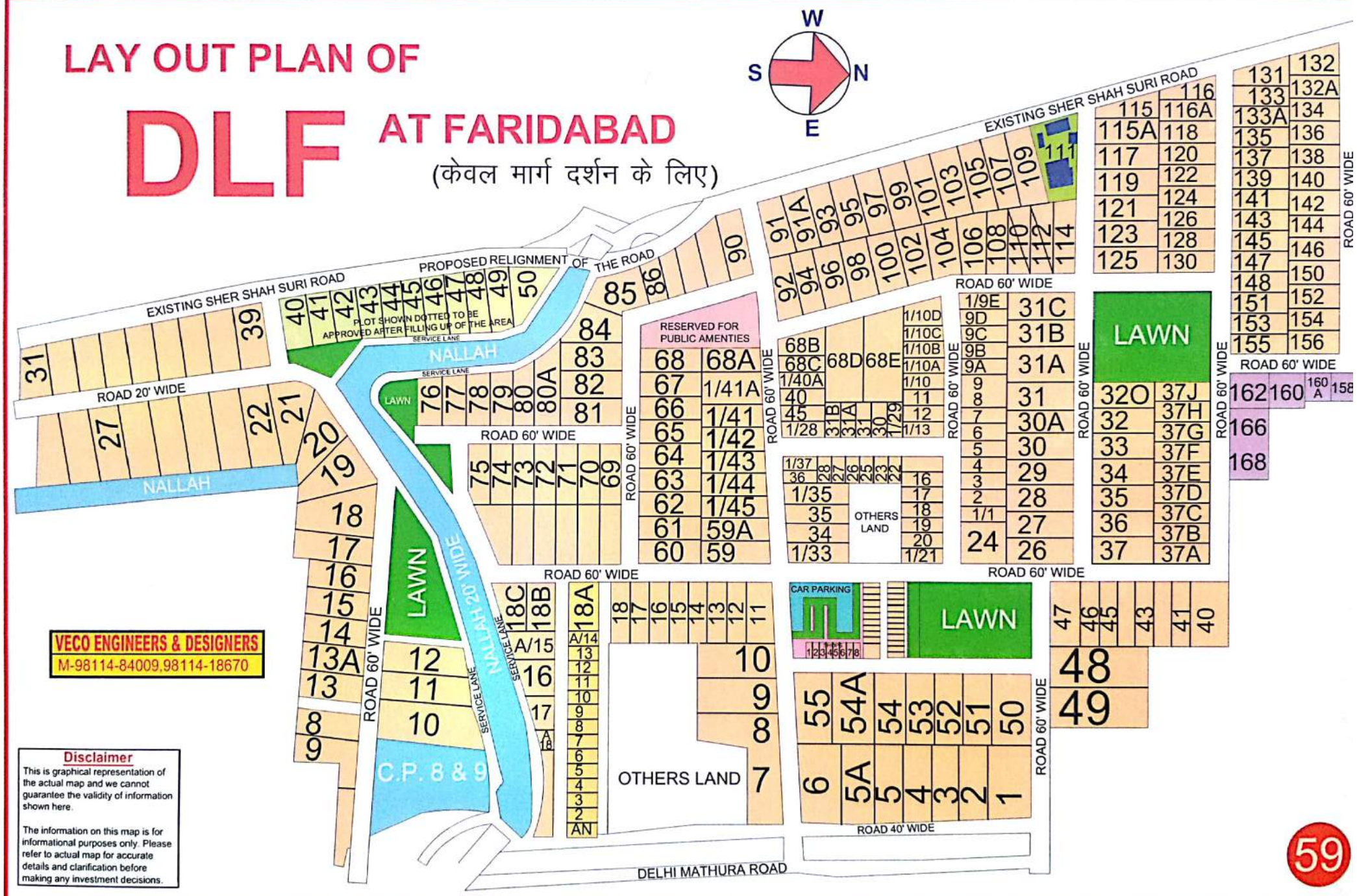

Scanned by CamScanner

LAY OUT PLAN OF INDUSTRIAL AREA AT FARIDABAD

(केवल मार्ग दर्शन के लिए)

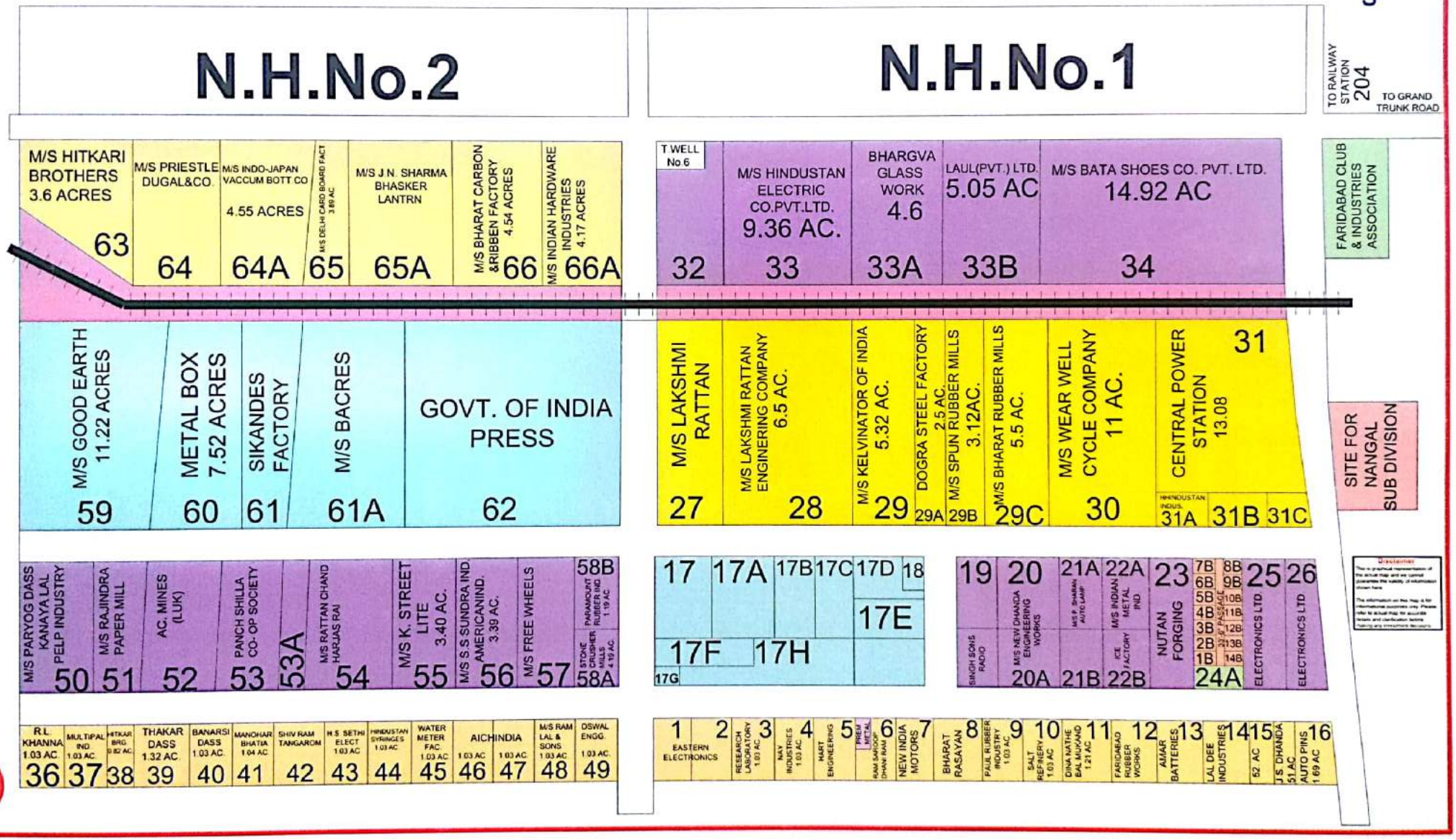

Scanned by CamScanner

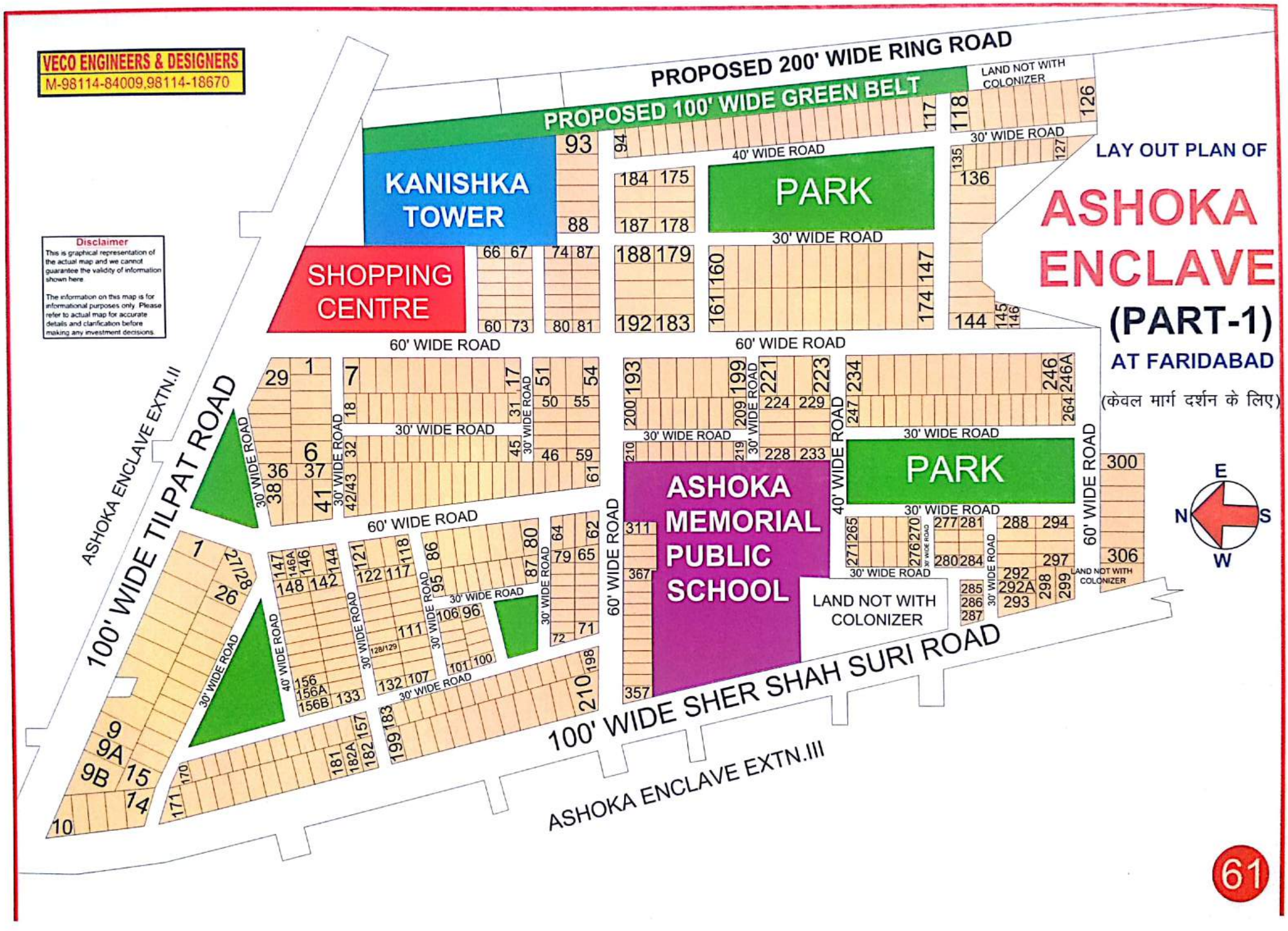

Scanned by CamScanner

VECO ENGINEERS & DESIGNERS
M-98114-84009,98114-18670

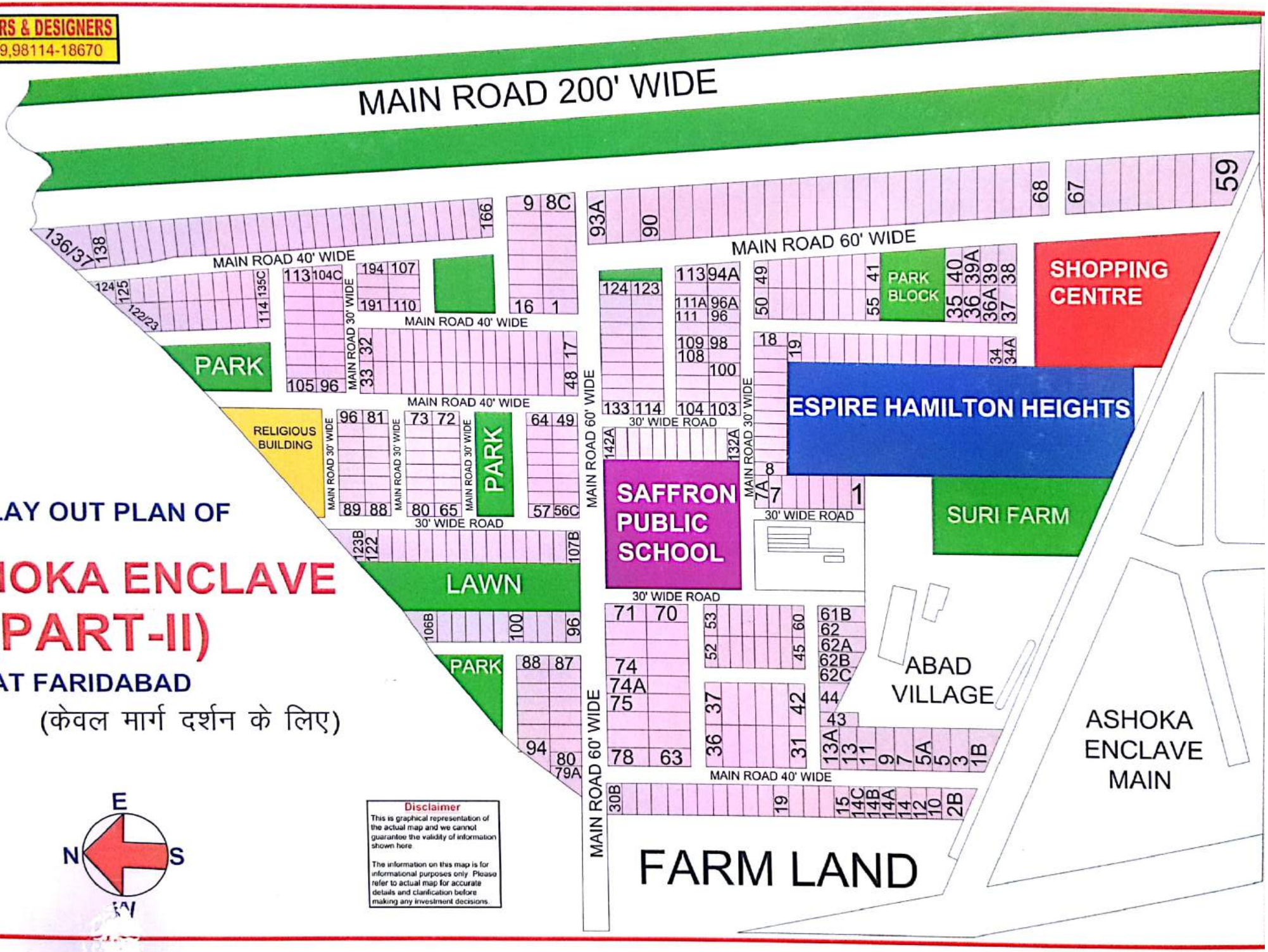

LAY OUT PLAN OF

ASHOKA ENCLAVE (PART-II)

AT FARIDABAD

(केवल मार्ग दर्शन के लिए)

Disclaimer

This is graphical representation of the actual map and we cannot guarantee the validity of information shown here.

The information on this map is for informational purposes only. Please refer to actual map for accurate details and clarification before making any investment decisions.

Scanned by CamScanner

Scanned by CamScanner

LAY OUT PLAN OF INDERAPRASTH COLONY AT FARIDABAD

(केवल मार्ग दर्शन के लिए)

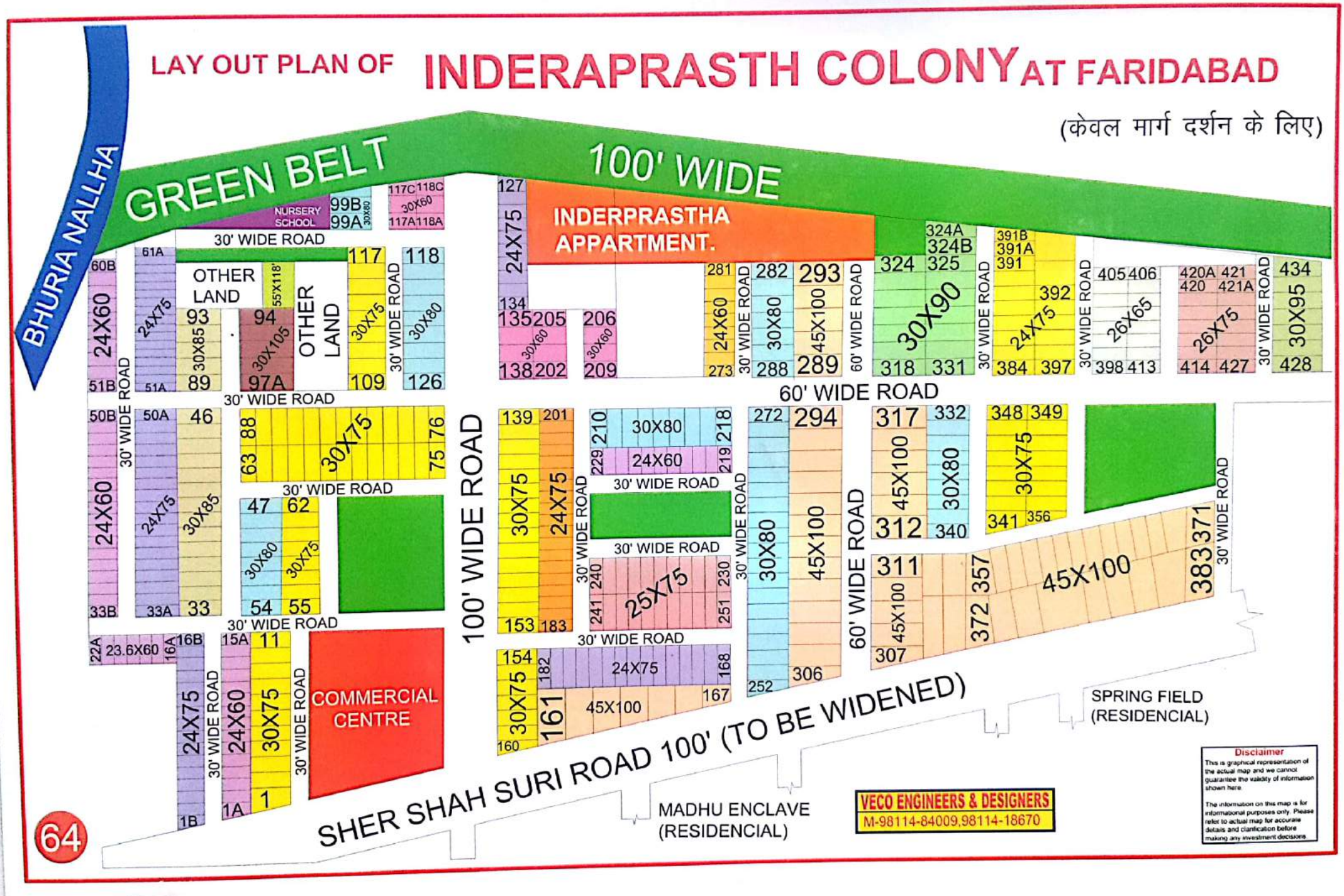

Scanned by CamScanner

SIZE	DIMENSIONS & AREA IN Mtrs.	No. of PLOTS
1-K	14x30	200
14-M	12x25	250
10-M	9.5x22	520
6-M	7.5x18	362
4-M	5.5x15	391
3-M	5x14	366
2-M	4.5x11	244

- PARK & GREEN BELT
- SHOPPING CENTRE
- HUDA LAND & RELEASED LAND
- NURSING HOME
- ROAD
- SCHOOLS & N.S.
- COMMUNITY CENTRE & DHARAMSHALA
- HBC (HOUSING BOARD COLONY)

Scanned by CamScanner

SIZE	DIMENSIONS & AREA IN Mtrs.	No. of PLOTS
1-K	14x30	200
14-M	12x25	250
10-M	9.5x22	520
6-M	7.5x18	362
4-M	5.5x15	391
3-M	5x14	366
2-M	4.5x11	244

- PARK & GREEN BELT
- SHOPPING CENTRE
- HUDA LAND & RELEASED LAND
- NURSING HOME
- ROAD
- SCHOOLS & N.S.
- COMMUNITY CENTRE & DHARAMSHALA
- HBC (HOUSING BOARD COLONY)

Scanned by CamScanner

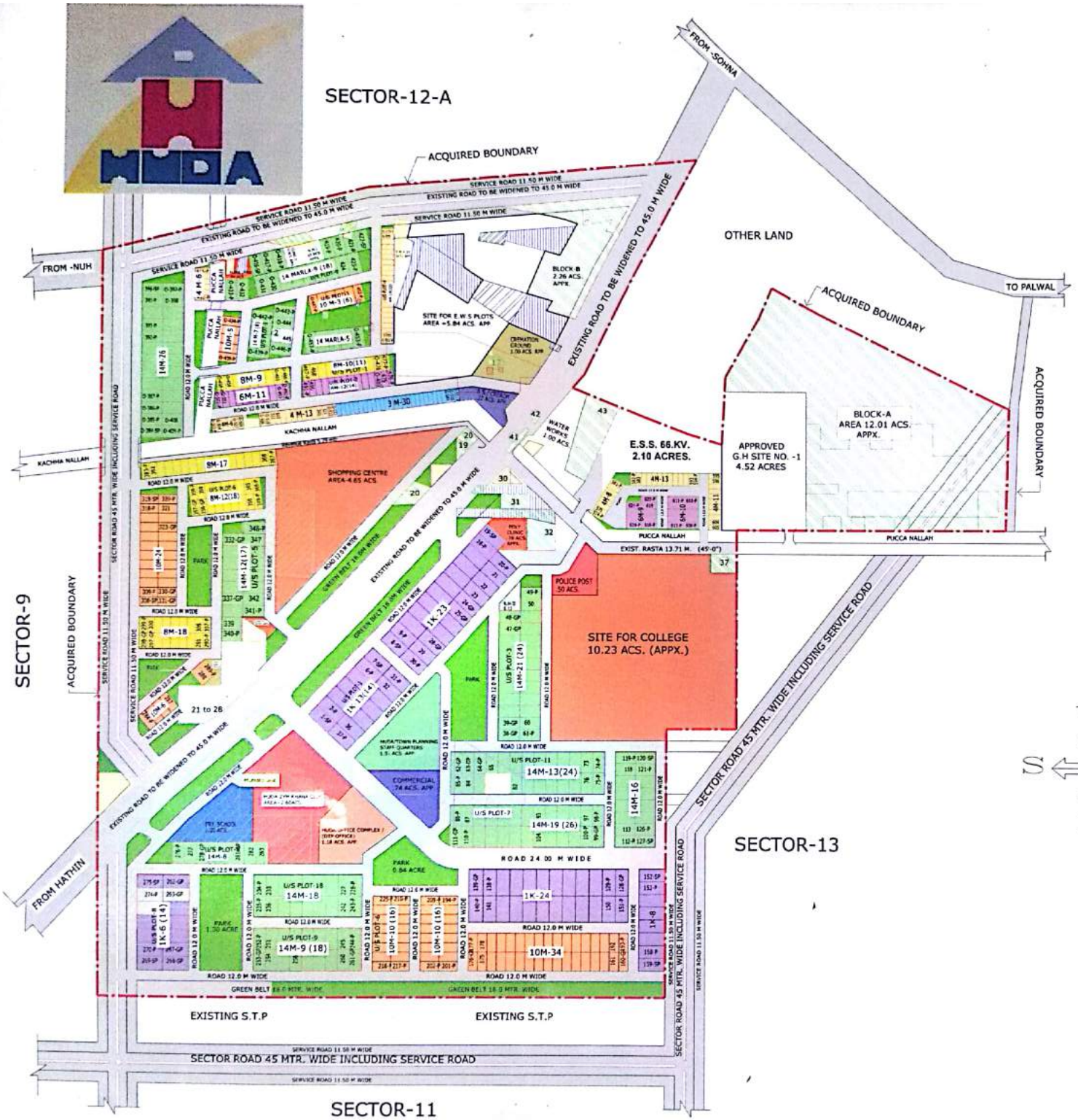

DETAIL OF PLOTS							
CATEGORY	DIMENSION & AREA IN Mtrs.	GENERAL PLOTS	GENERAL CLEAR PLOTS	OUTSEES CLEAR PLOTS	TOTAL PLOTS UNDER STAY/ CWP	TOTAL CLEAR PLOTS ALARLE	GRANT TOTAL PLOTS
1K	15x30	83	74	-	9	74	83
14M	13.5x24	166	95	42	71	137	208
10M	10.5x21	101	92	6	9	98	107
8M	9x18	57	50	16	7	66	73
6M	7.5x18	30	28	14	2	42	44
4M	6x15	71	64	8	7	72	79
3M	5x15	-	-	30	-	30	30
TOTAL		508	403	116	105	519	624

REF:-

AREA UNDER STAY/CWP SHOWN THUS:-

AREA UNDER ALREADY RELEASED LAND SHOWN THUS:-

AREA UNDER ENCROACHMENT SHOWN THUS:-

EXISTING NALA :-

RECOMMENDED TO BE REALISHED APPLICANT LAND BY ADMINISTRATOR HUDA FBD. SHOWN THUS:-

LAYOUT PLAN OF
SECTOR-12
PALWAL
(केवल मार्ग दर्शन के लिए)

Scanned by CamScanner

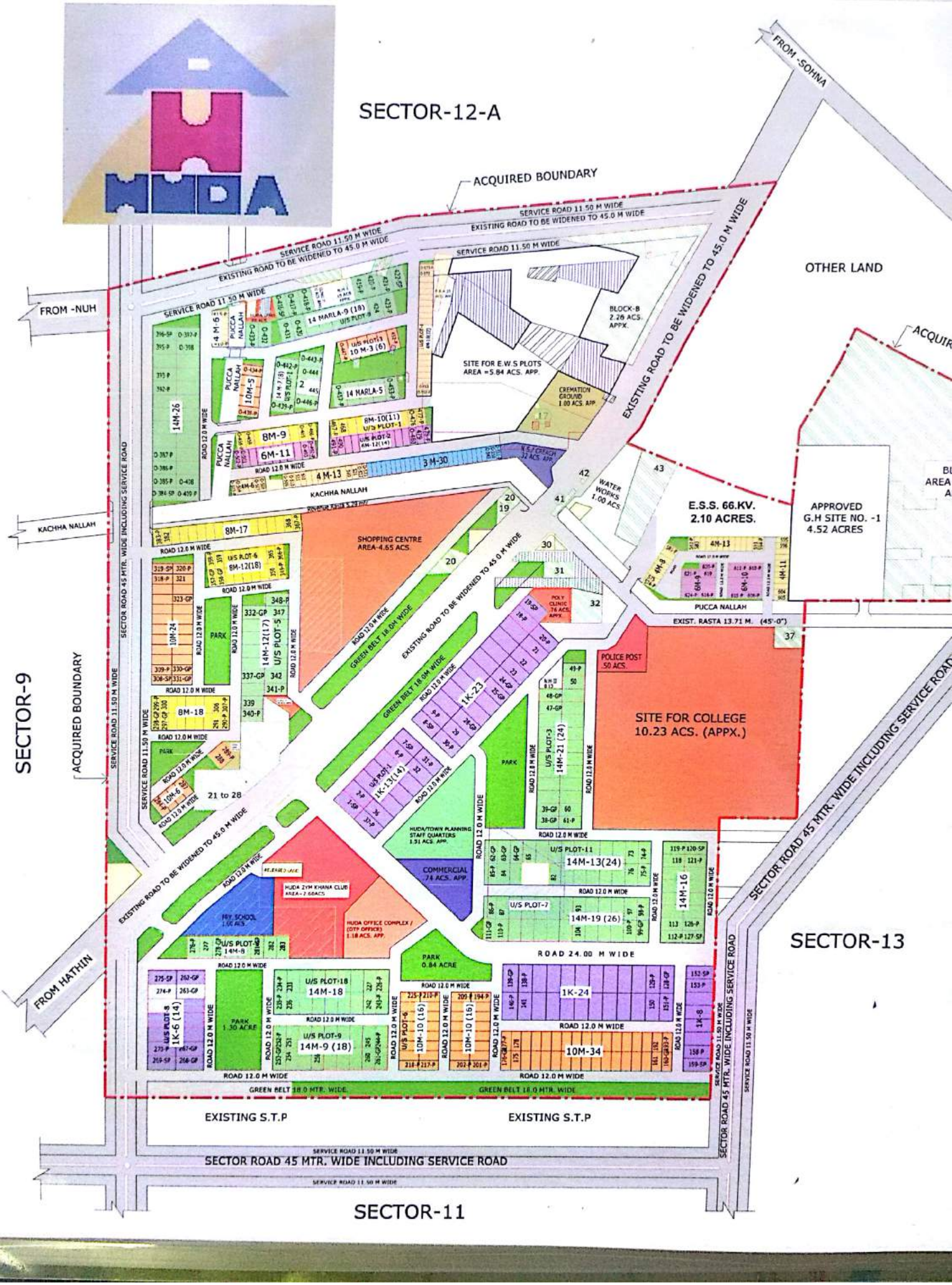

Scanned by CamScanner